Hartwell parcels: Map of sampling grid

Hartwell sampling grid, Cell 6

Labels show parcel ID numbers and property address record.

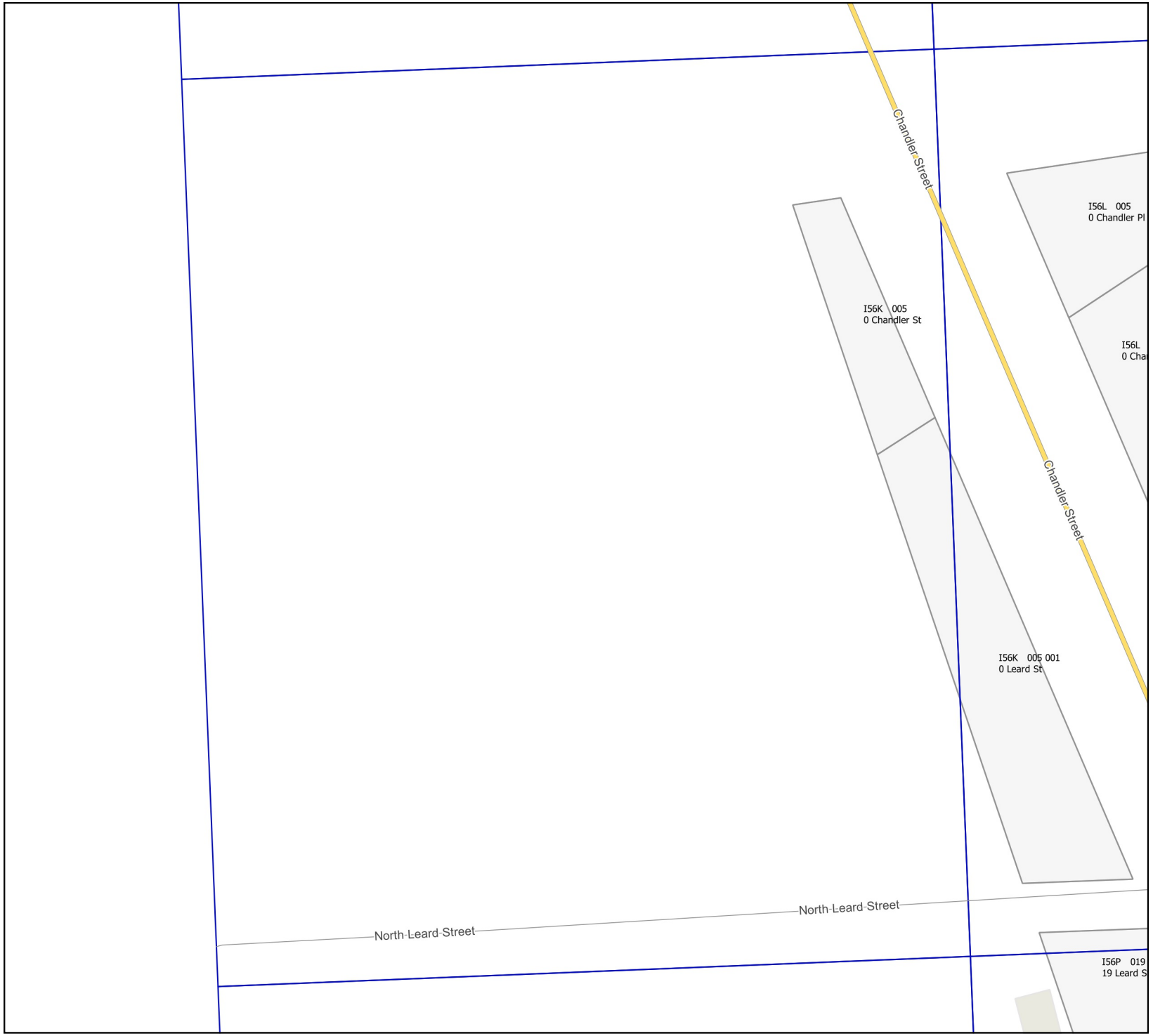

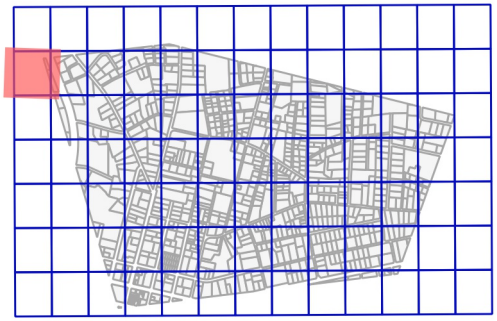

Hartwell sampling grid, Cell 10

Labels show parcel ID numbers and property address record.

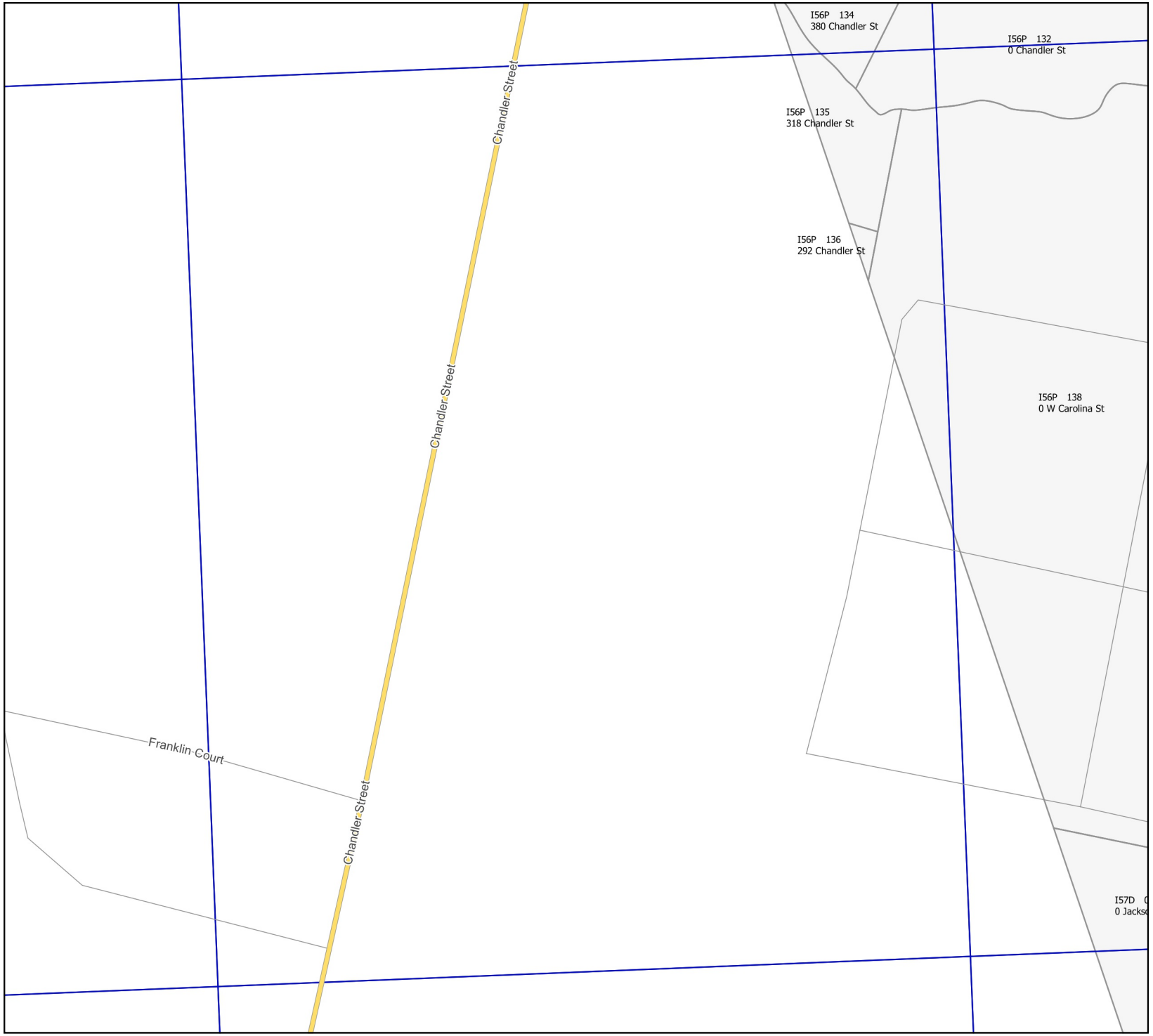

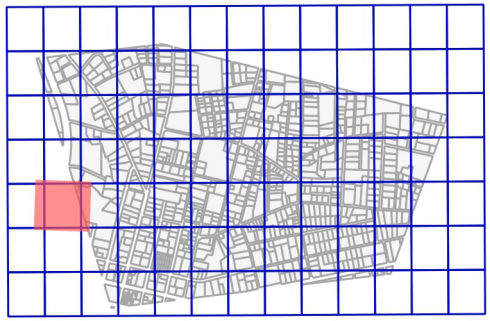

Hartwell sampling grid, Cell 11

Labels show parcel ID numbers and property address record.

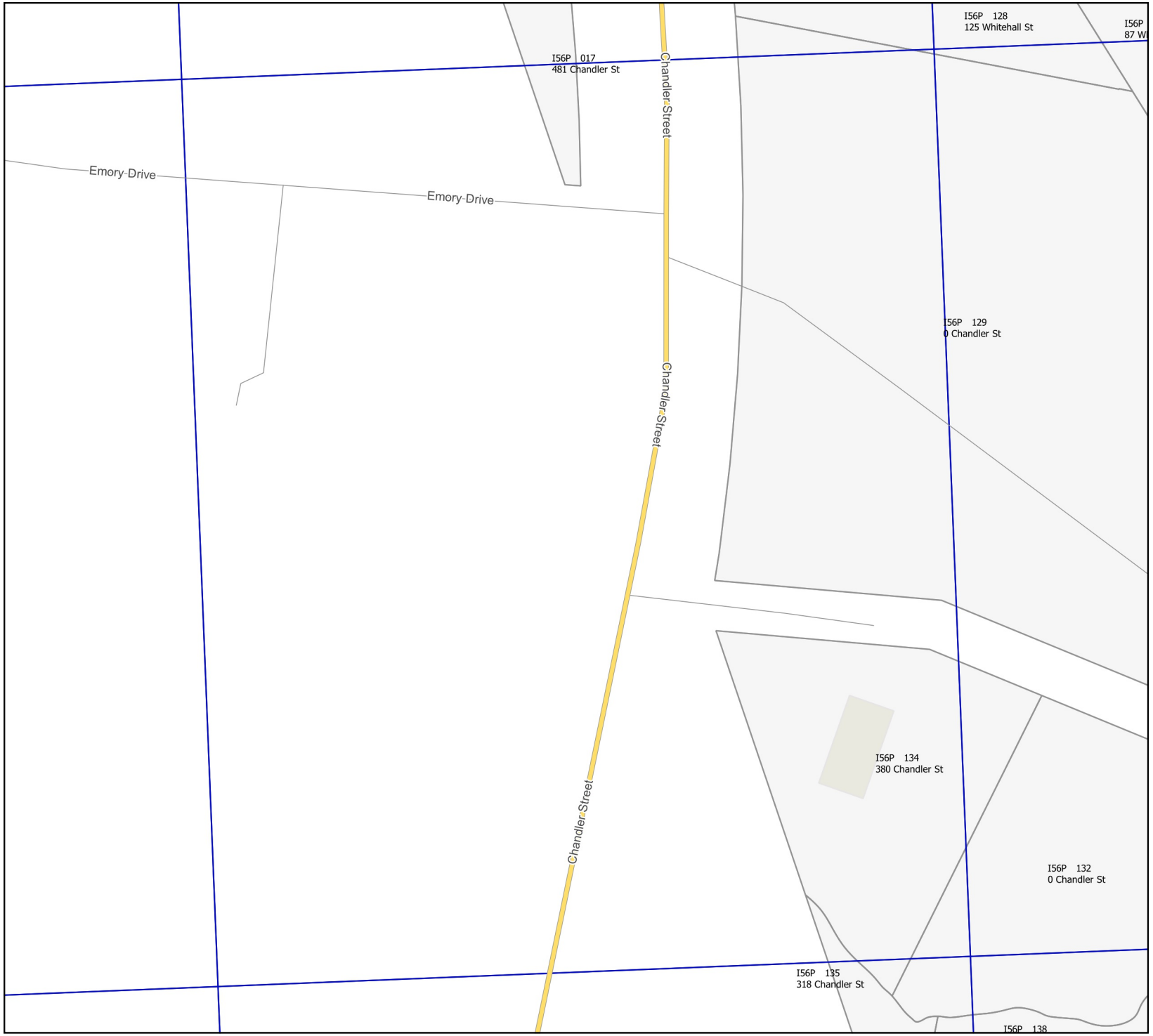

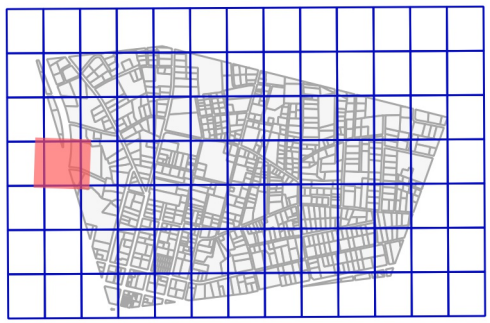

Hartwell sampling grid, Cell 12

Labels show parcel ID numbers and property address record.

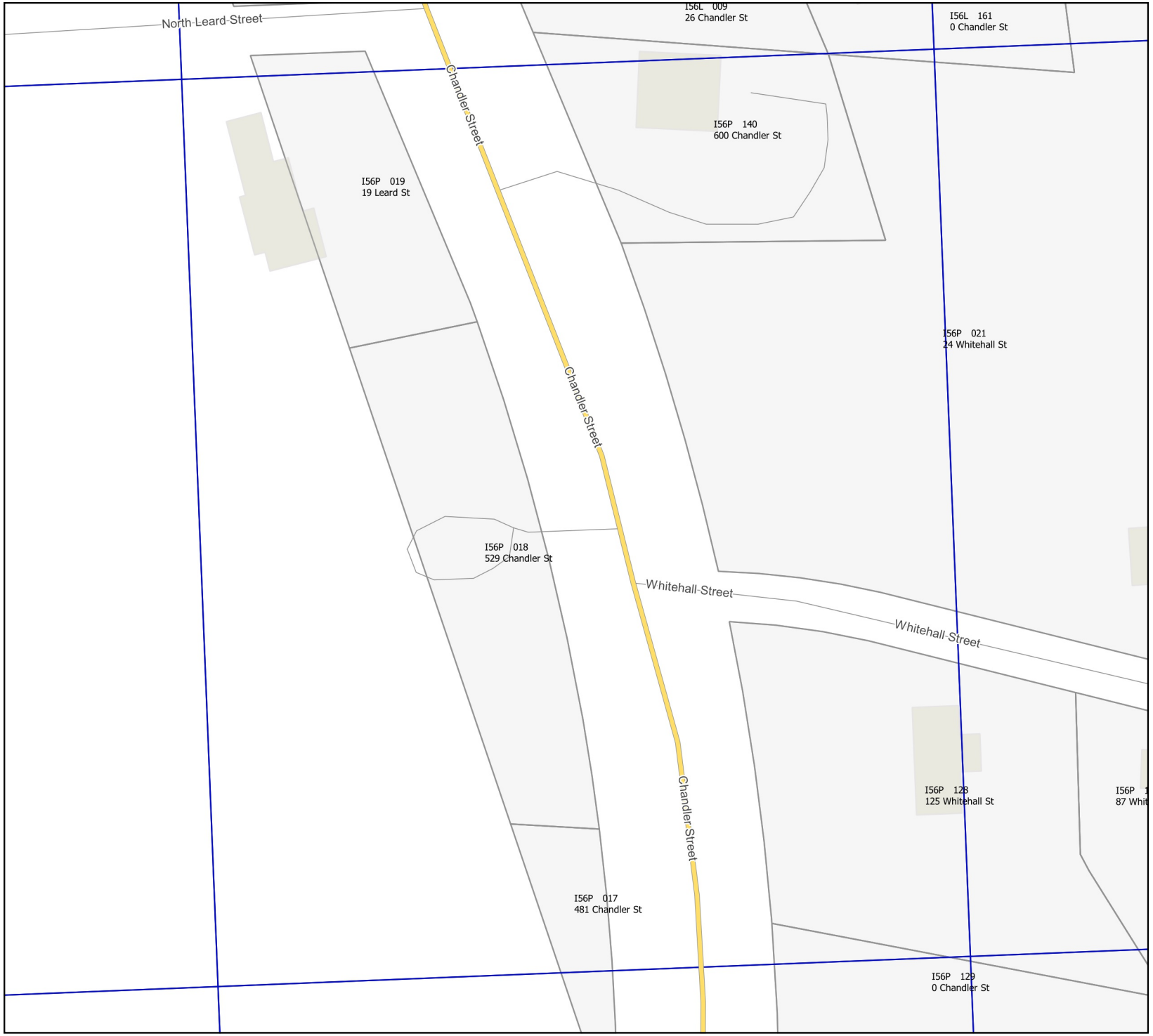

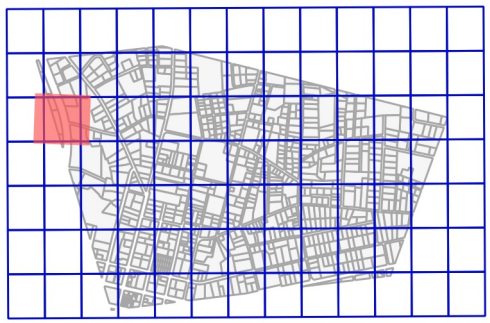

Hartwell sampling grid, Cell 13

Labels show parcel ID numbers and property address record.

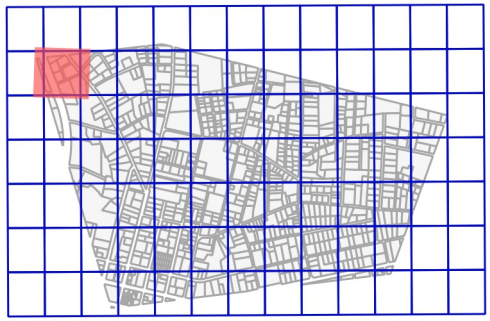

Hartwell sampling grid, Cell 15

Labels show parcel ID numbers and property address record.

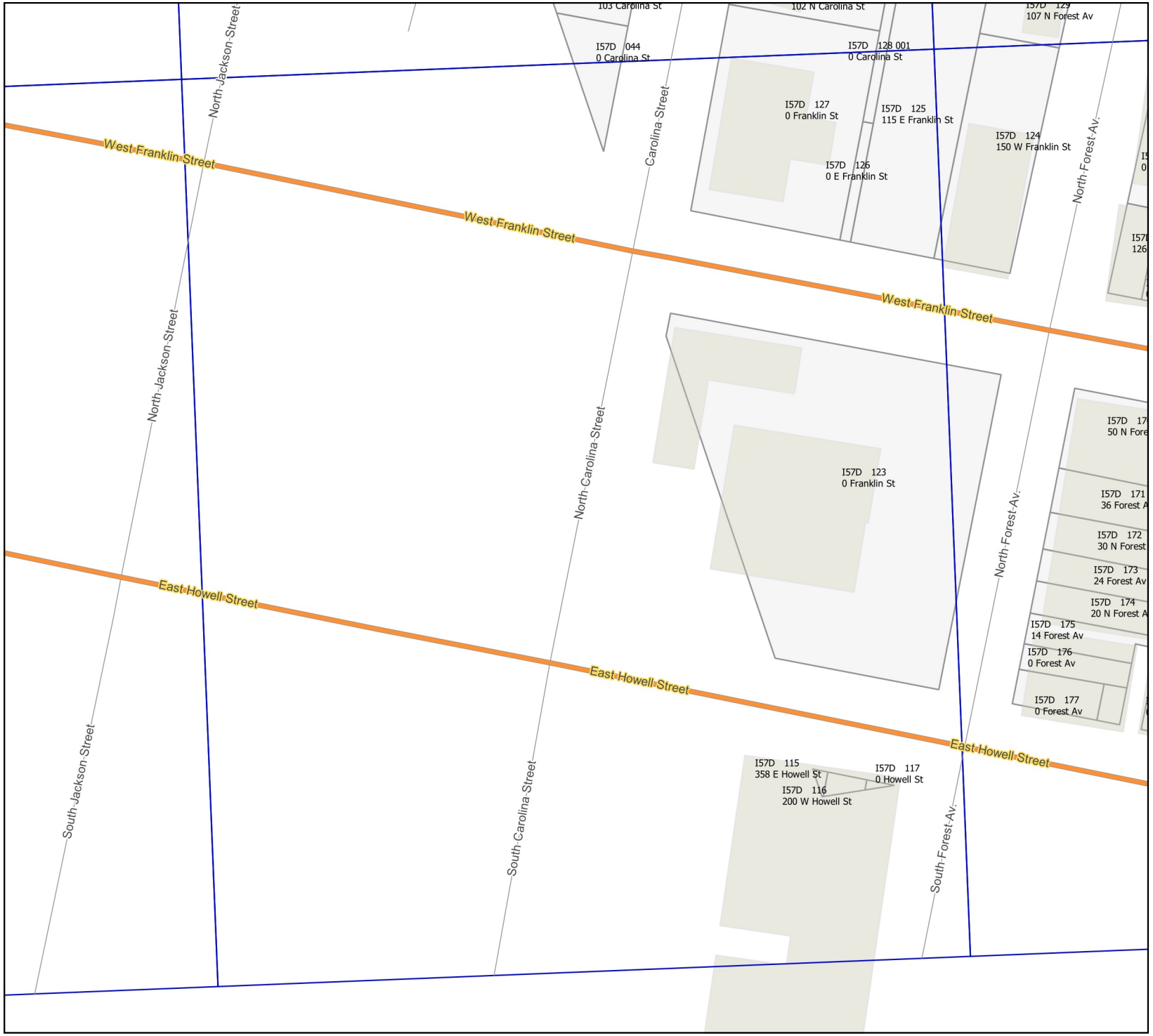

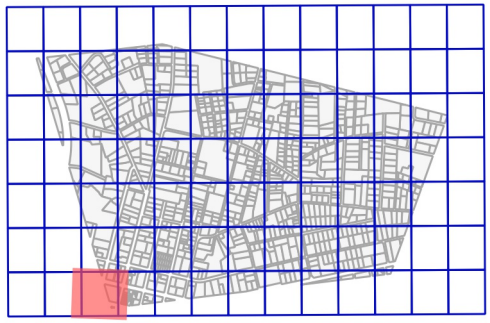

Hartwell sampling grid, Cell 16

Labels show parcel ID numbers and property address record.

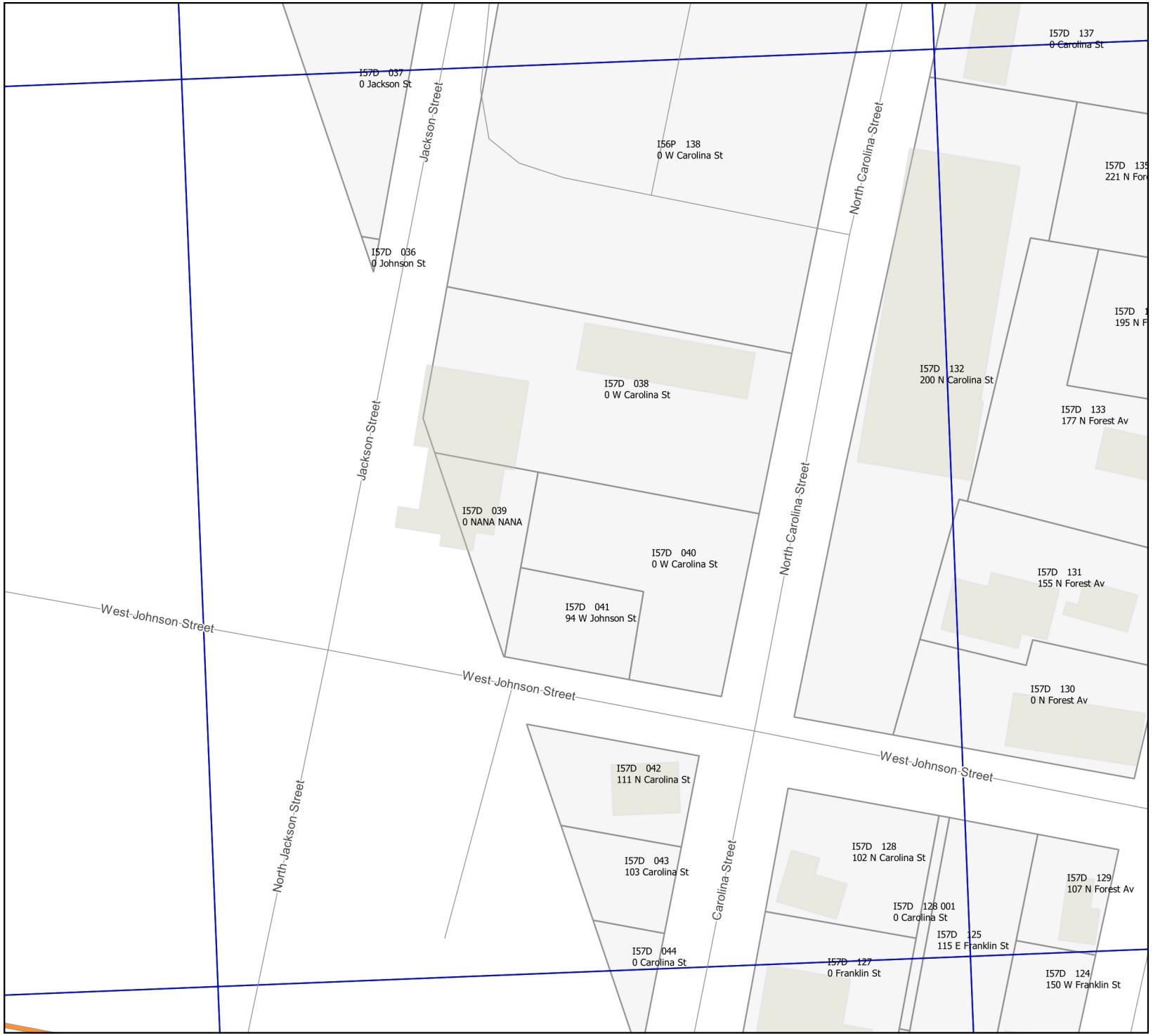

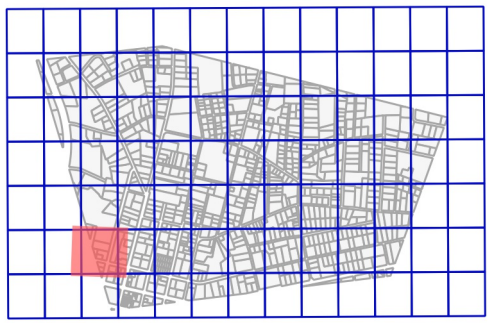

Hartwell sampling grid, Cell 17

Labels show parcel ID numbers and property address record.

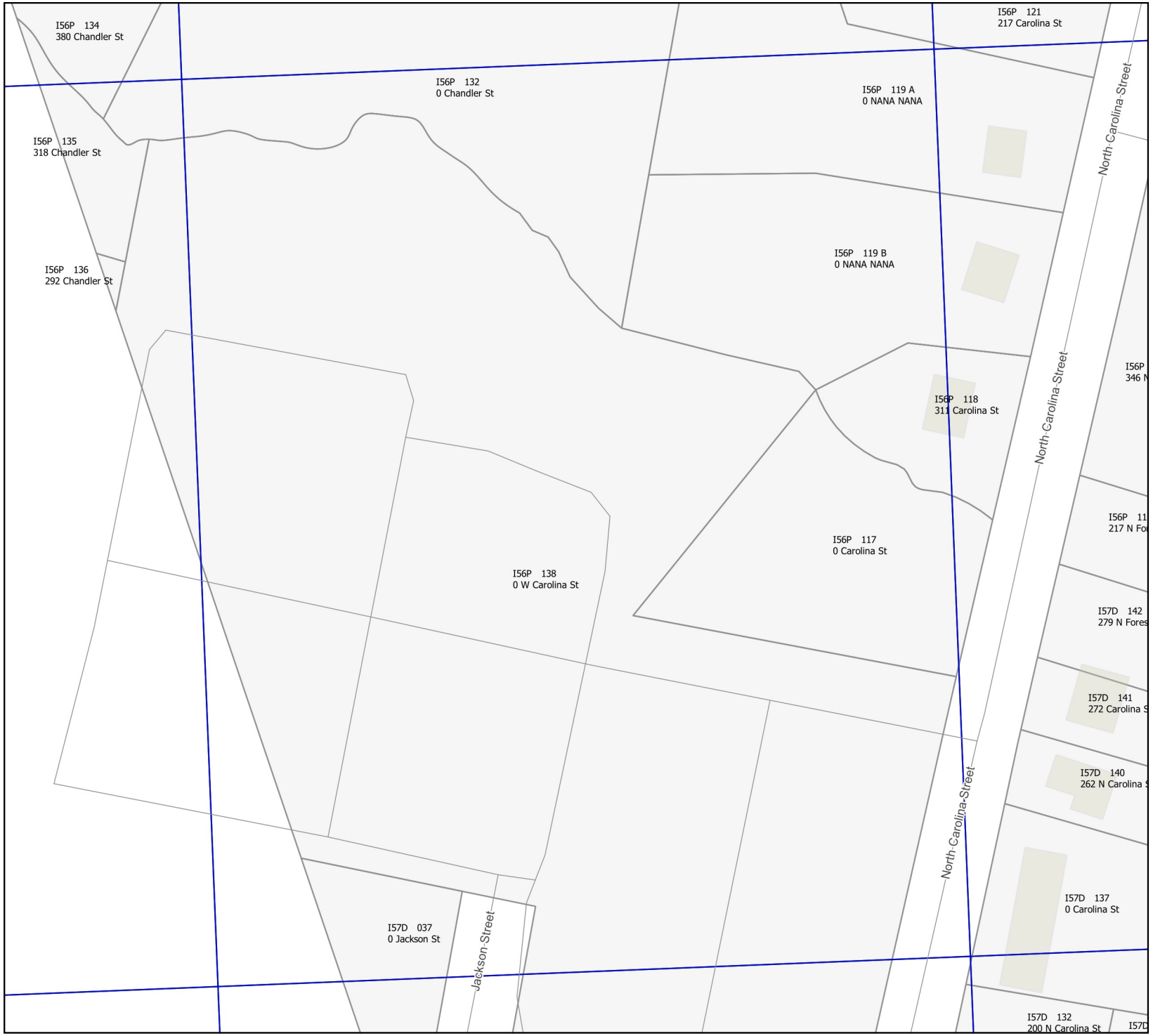

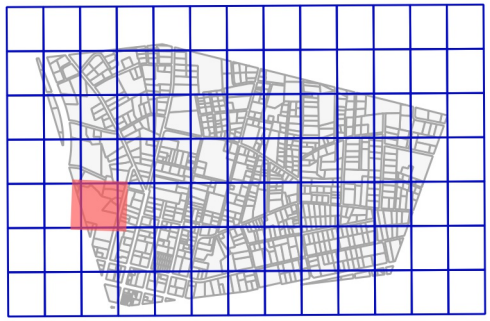

Hartwell sampling grid, Cell 18

Labels show parcel ID numbers and property address record.

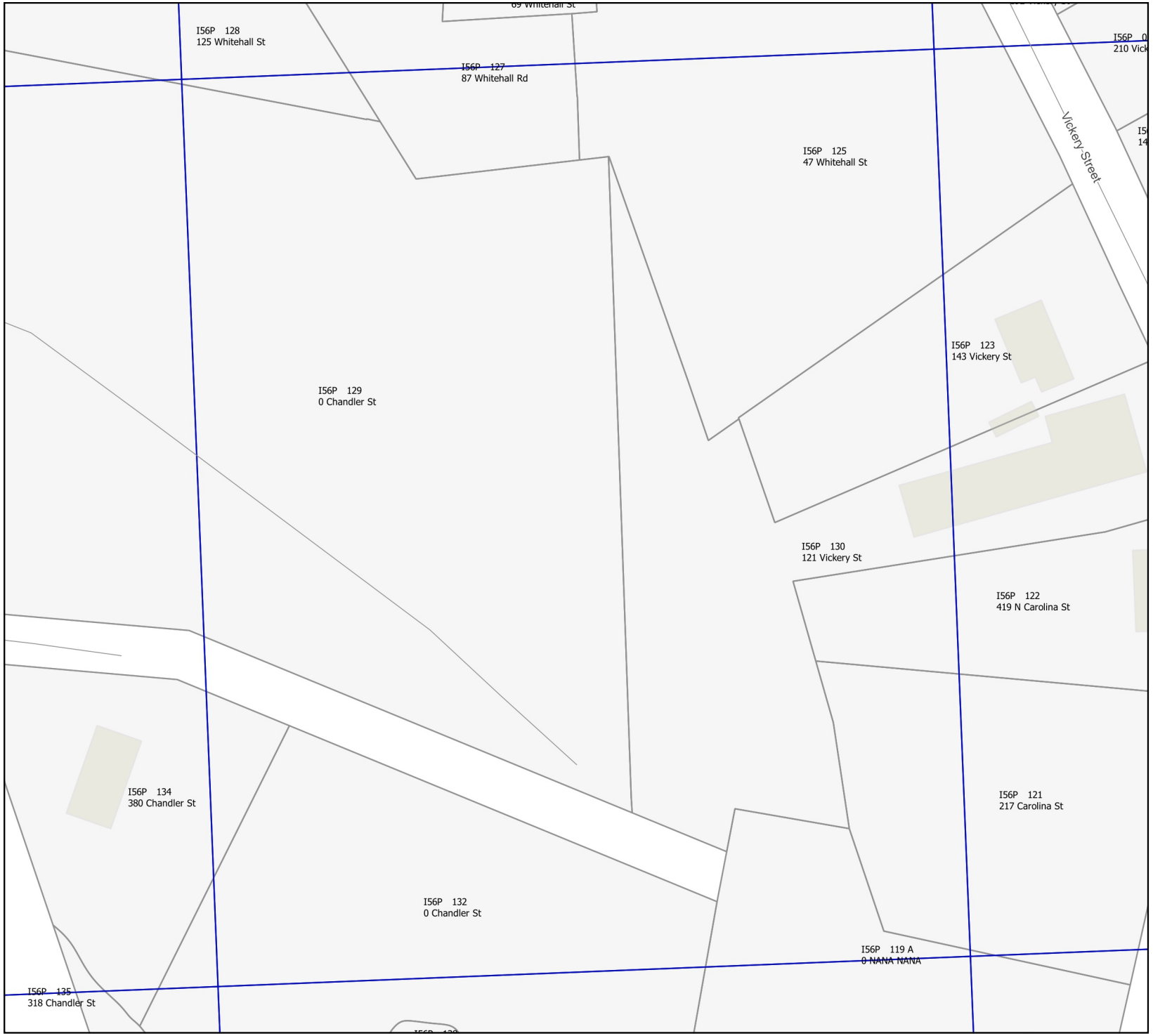

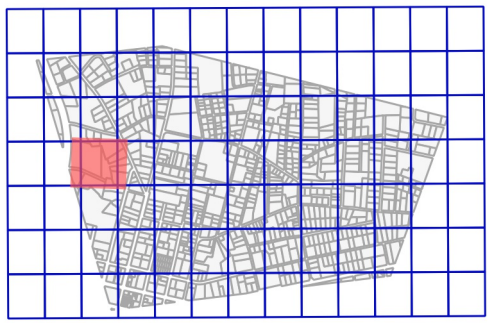

Hartwell sampling grid, Cell 19

Labels show parcel ID numbers and property address record.

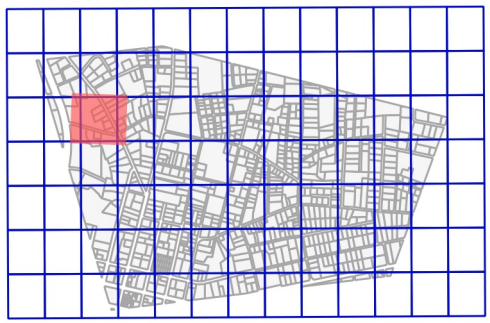

Hartwell sampling grid, Cell 20

Labels show parcel ID numbers and property address record.

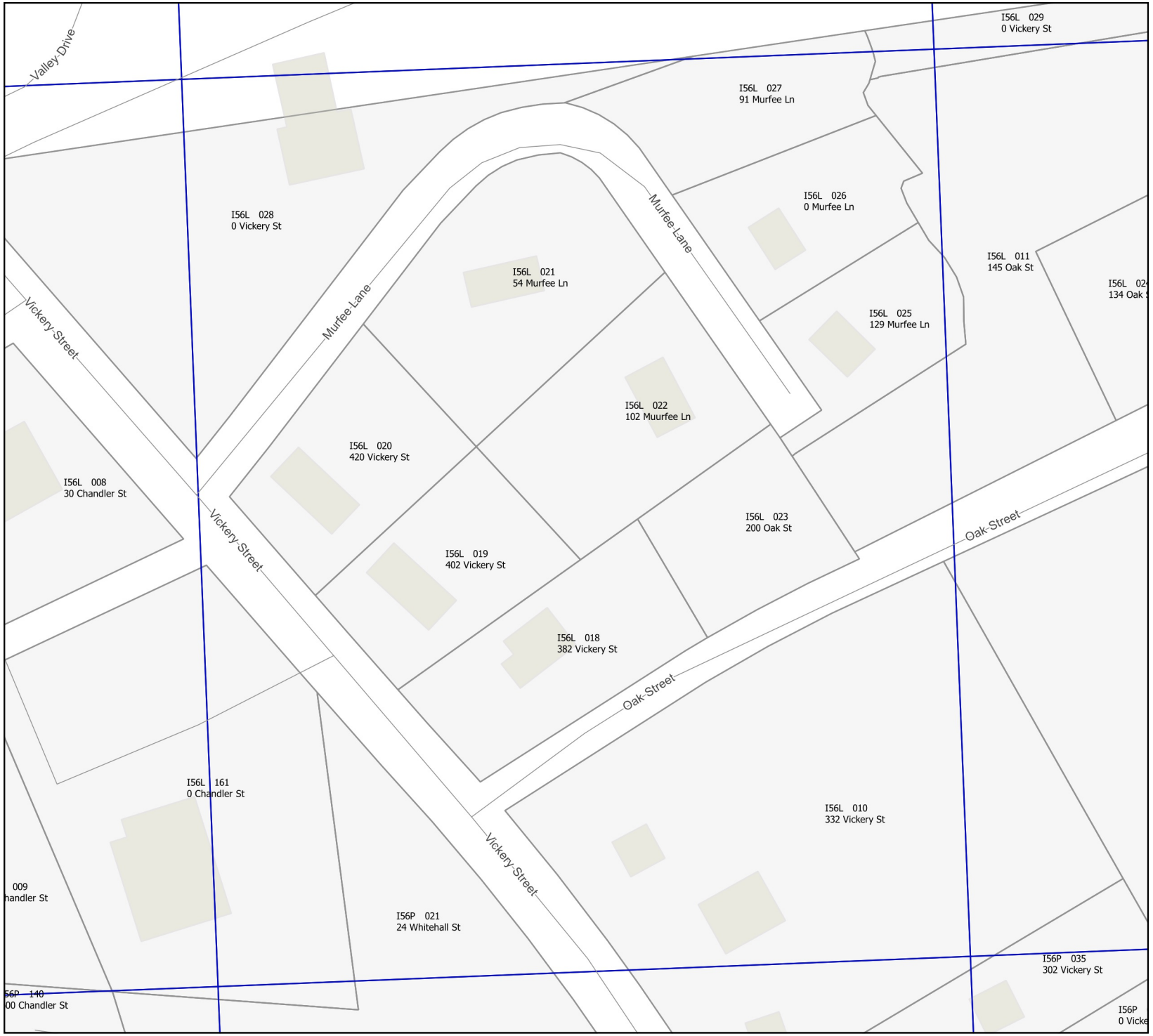

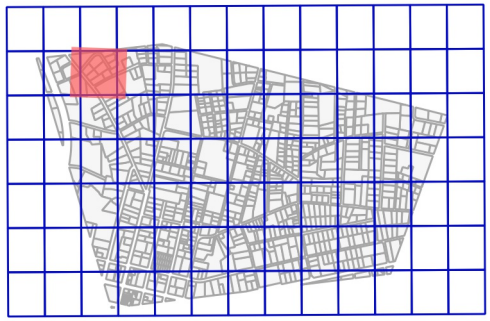

Hartwell sampling grid, Cell 22

Labels show parcel ID numbers and property address record.

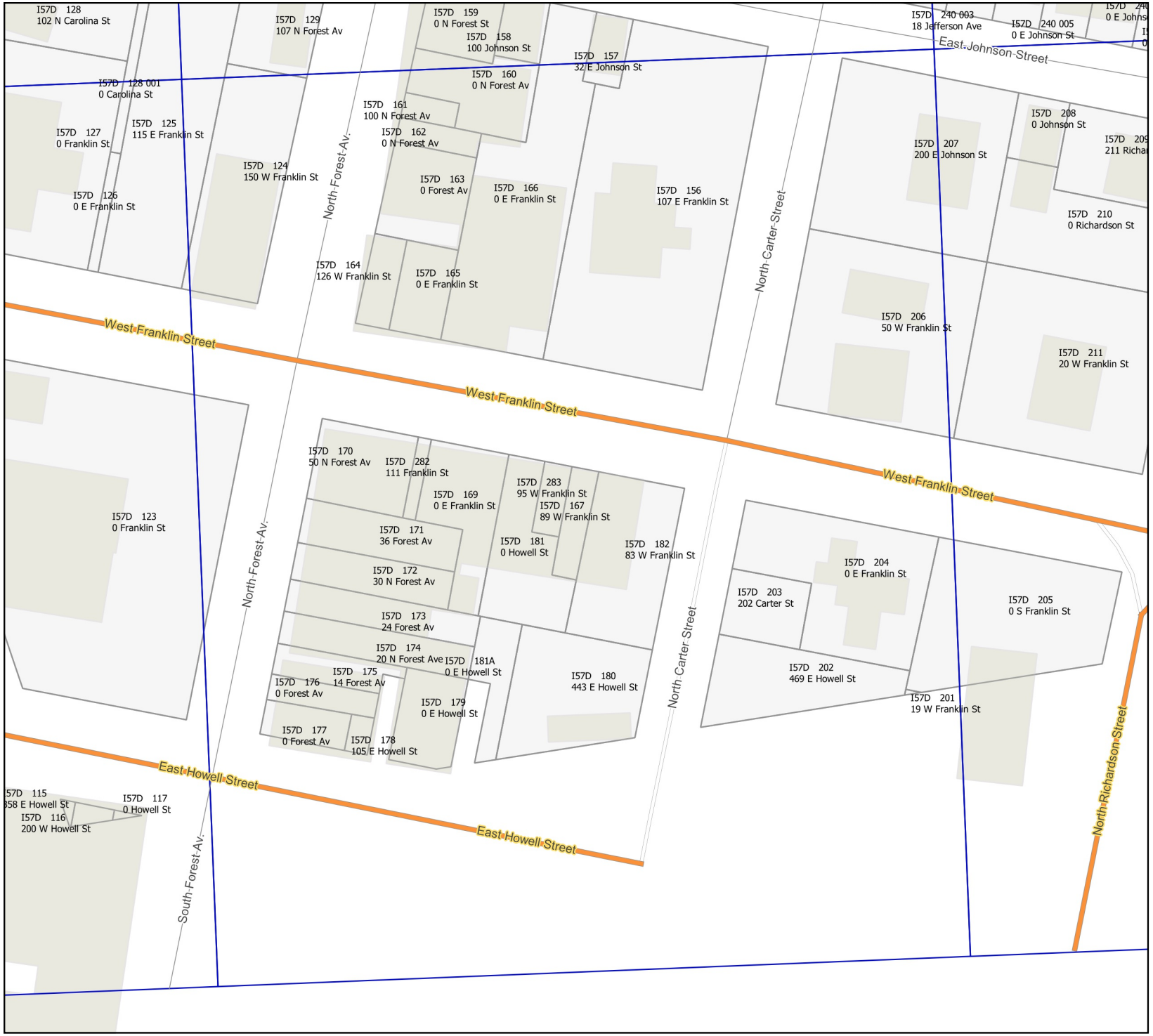

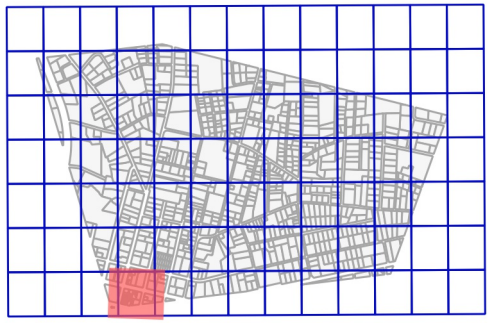

Hartwell sampling grid, Cell 23

Labels show parcel ID numbers and property address record.

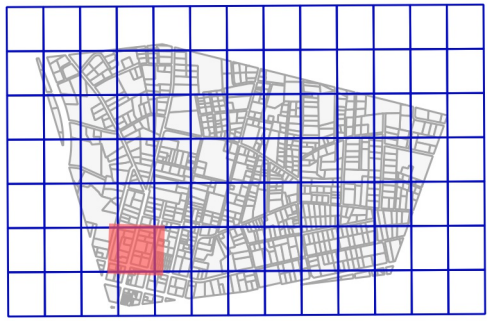

Hartwell sampling grid, Cell 24

Labels show parcel ID numbers and property address record.

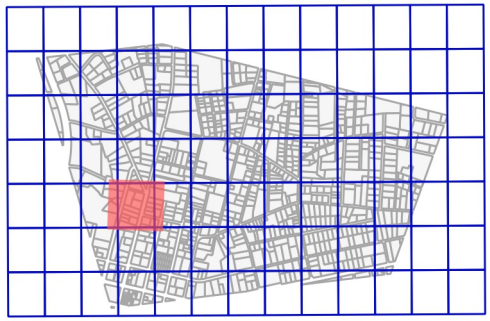

Hartwell sampling grid, Cell 25

Labels show parcel ID numbers and property address record.

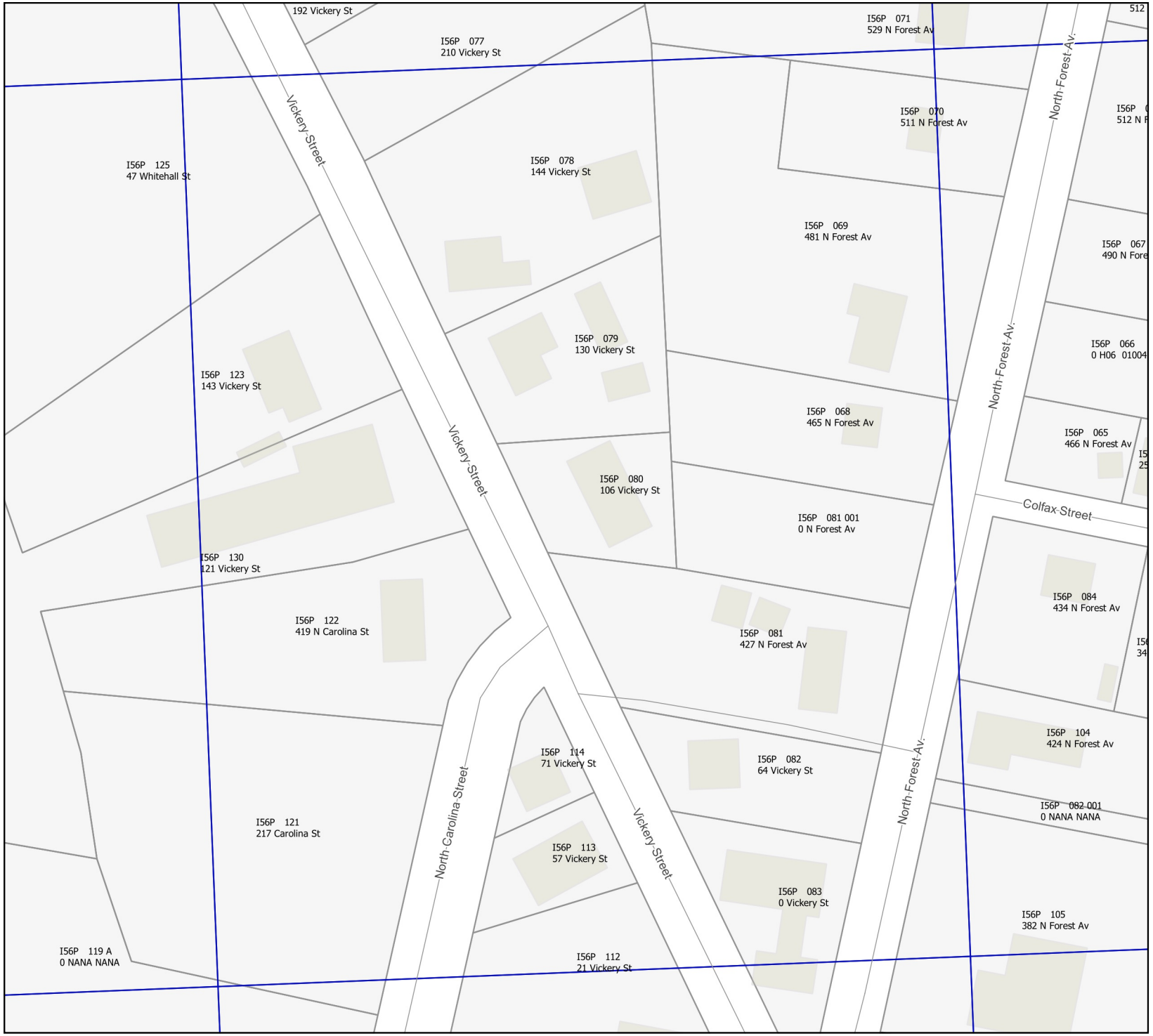

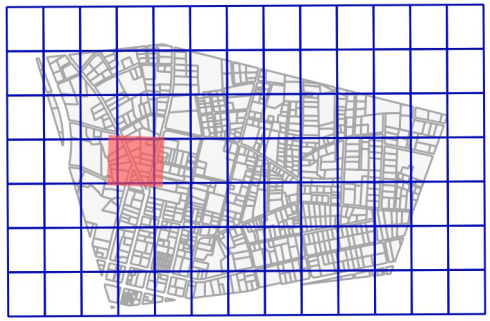

Hartwell sampling grid, Cell 26

Labels show parcel ID numbers and property address record.

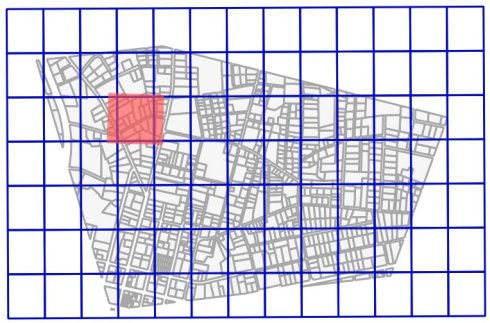

Hartwell sampling grid, Cell 27

Labels show parcel ID numbers and property address record.

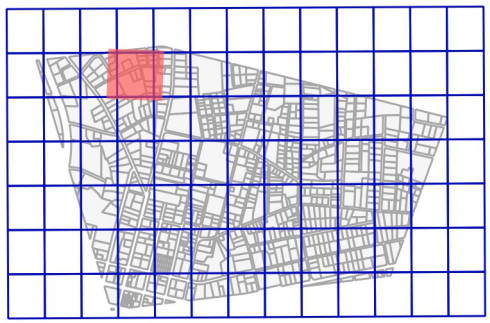

Hartwell sampling grid, Cell 28

Labels show parcel ID numbers and property address record.

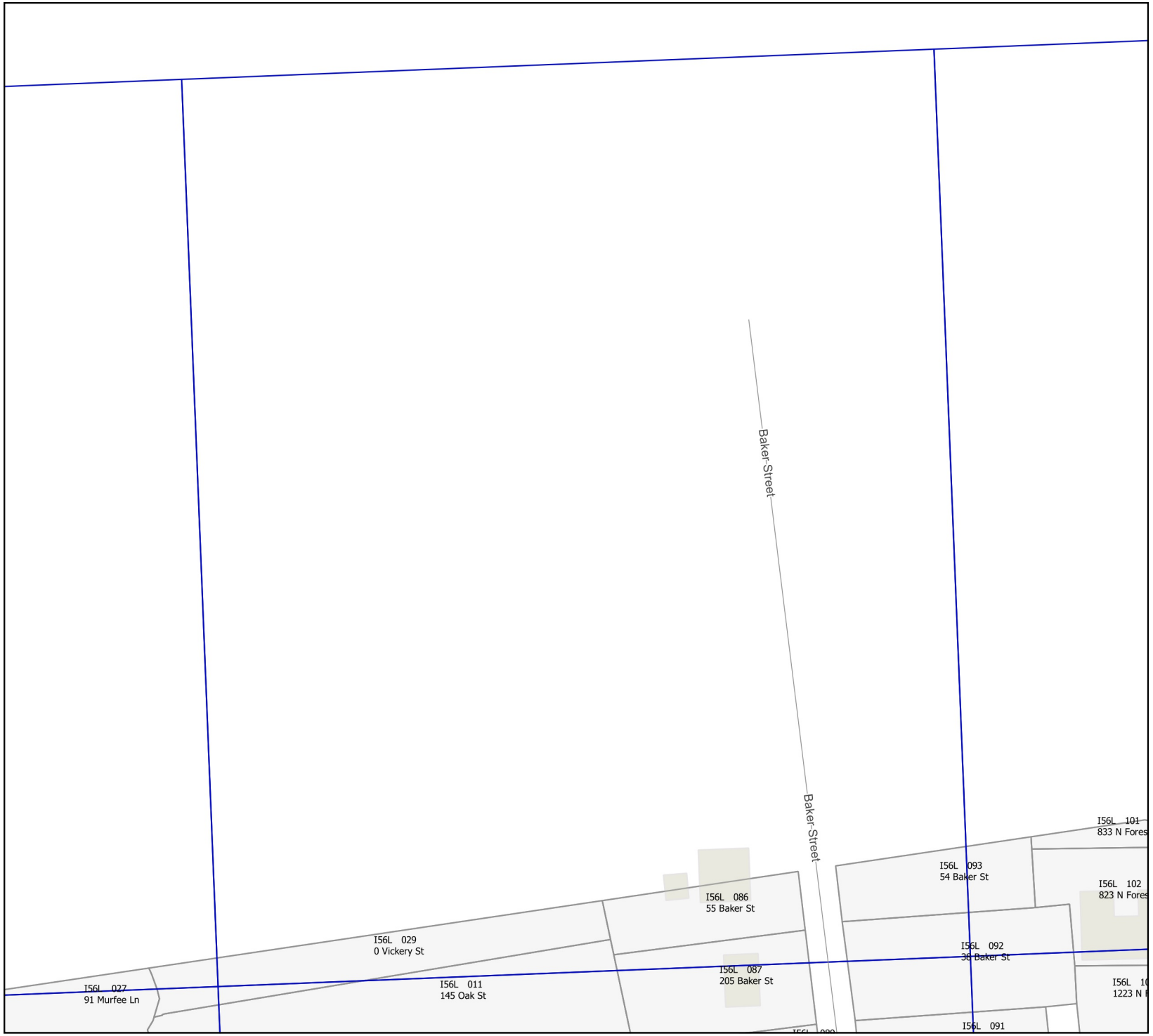

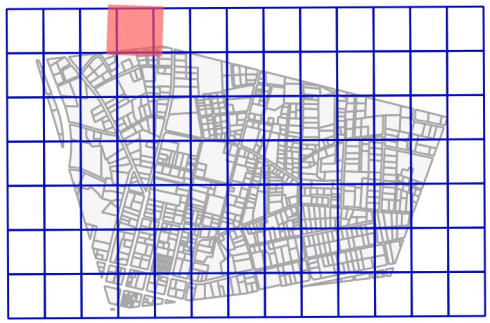

Hartwell sampling grid, Cell 29

Labels show parcel ID numbers and property address record.

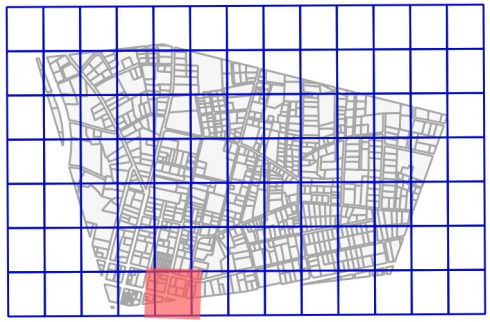

Hartwell sampling grid, Cell 30

Labels show parcel ID numbers and property address record.

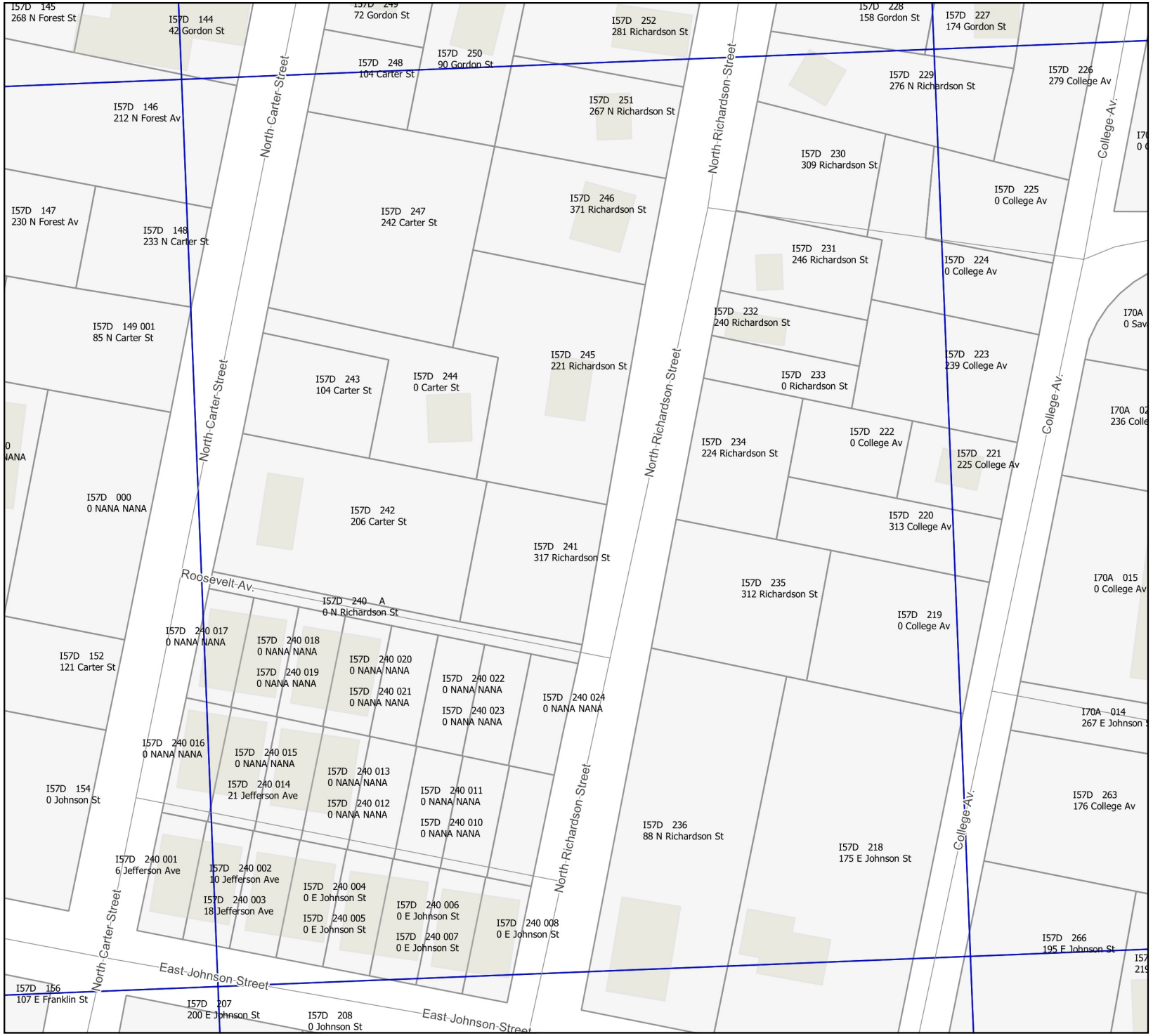

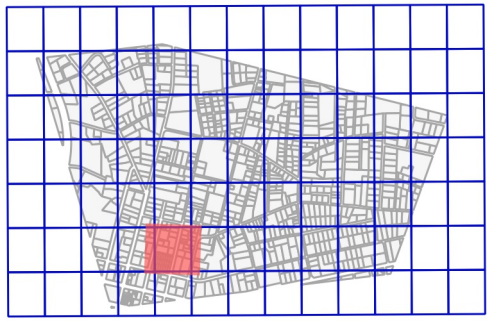

Hartwell sampling grid, Cell 31

Labels show parcel ID numbers and property address record.

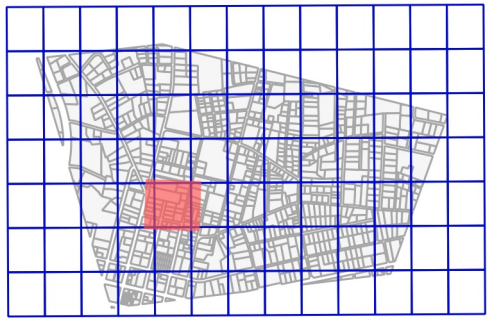

Hartwell sampling grid, Cell 32

Labels show parcel ID numbers and property address record.

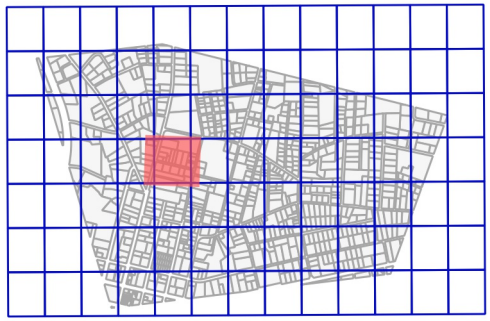

Hartwell sampling grid, Cell 33

Labels show parcel ID numbers and property address record.

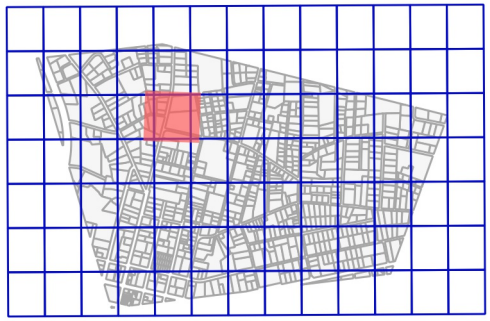

Hartwell sampling grid, Cell 34

Labels show parcel ID numbers and property address record.

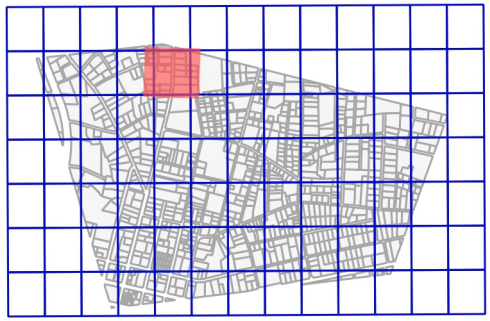

Hartwell sampling grid, Cell 35

Labels show parcel ID numbers and property address record.

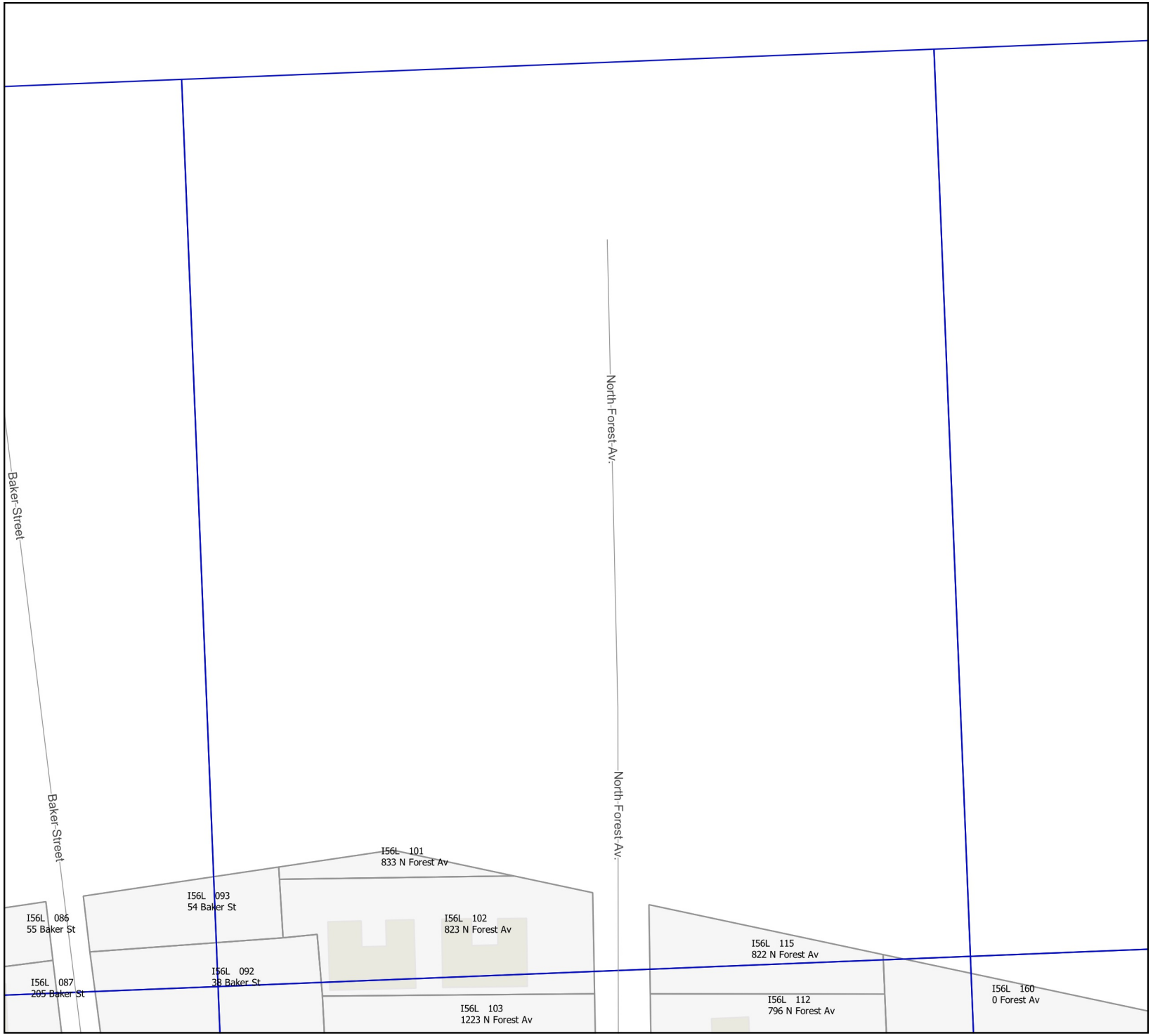

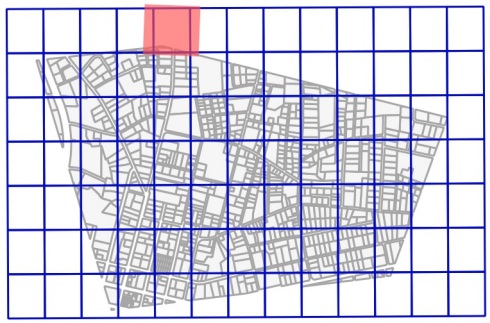

Hartwell sampling grid, Cell 36

Labels show parcel ID numbers and property address record.

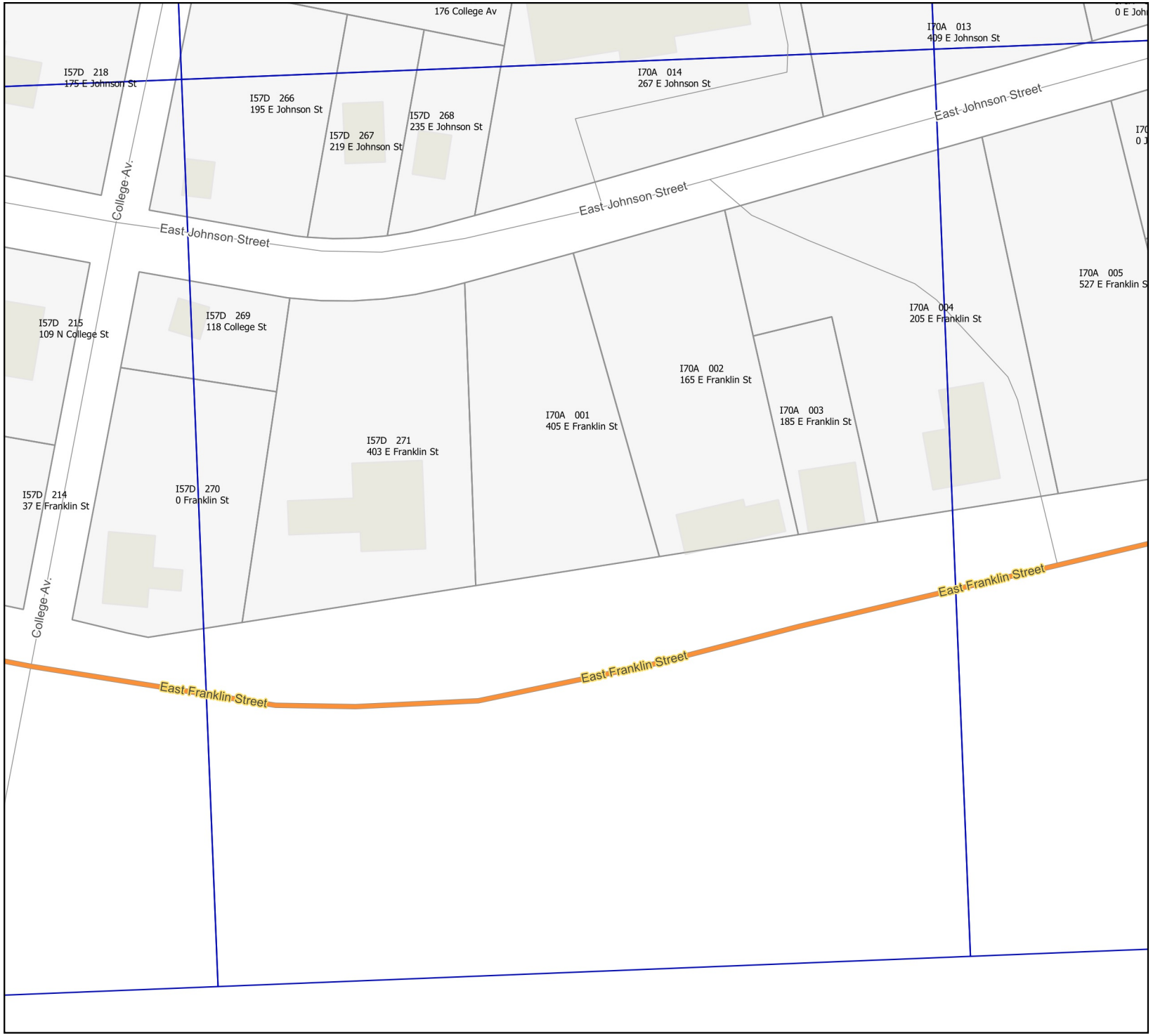

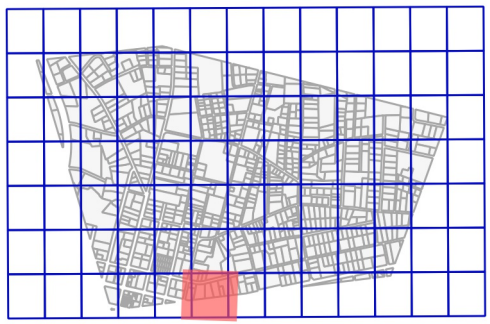

Hartwell sampling grid, Cell 37

Labels show parcel ID numbers and property address record.

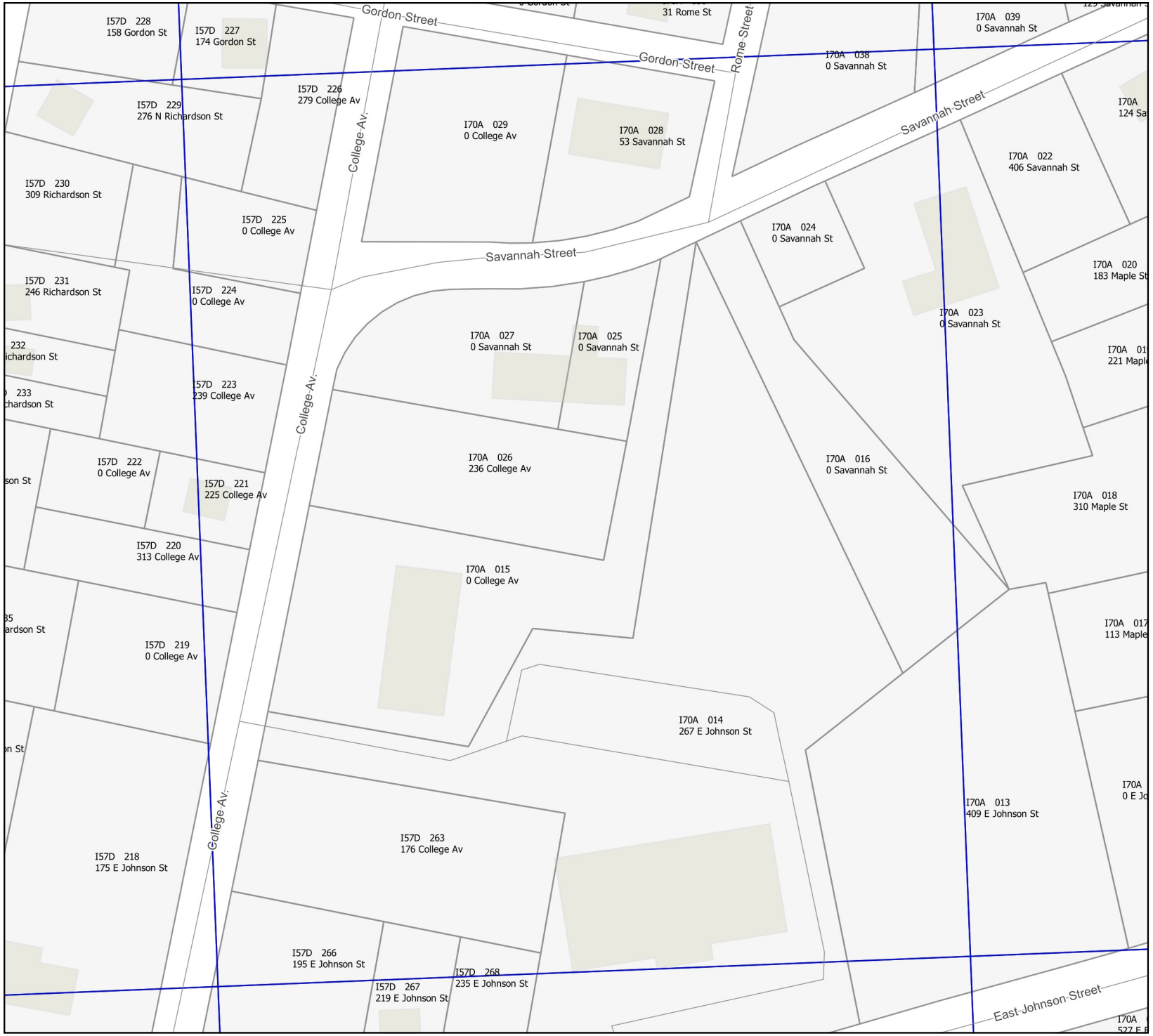

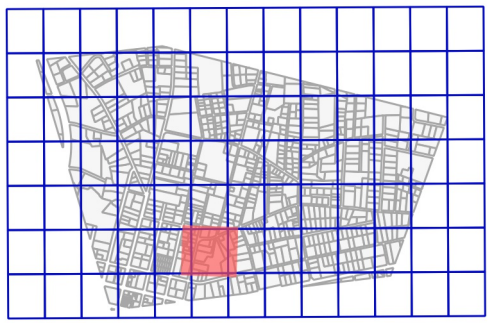

Hartwell sampling grid, Cell 38

Labels show parcel ID numbers and property address record.

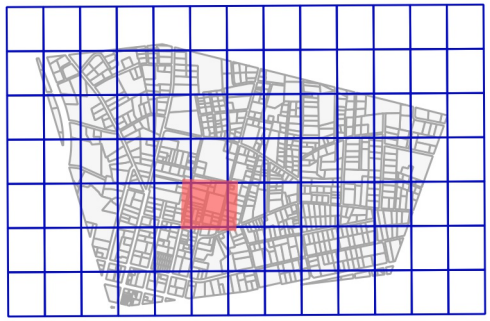

Hartwell sampling grid, Cell 39

Labels show parcel ID numbers and property address record.

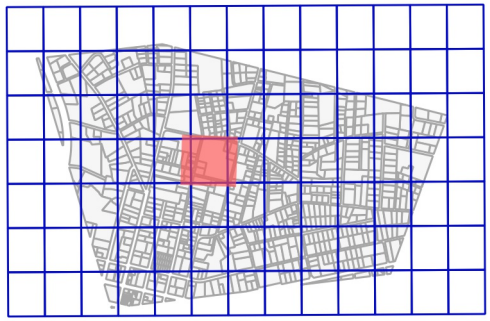

Hartwell sampling grid, Cell 40

Labels show parcel ID numbers and property address record.

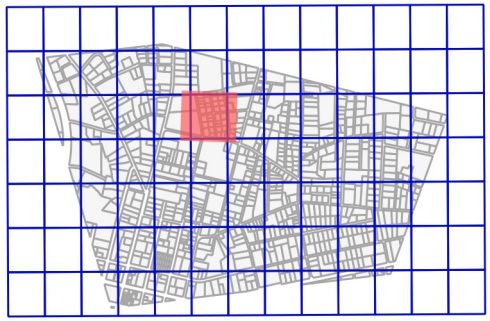

Hartwell sampling grid, Cell 41

Labels show parcel ID numbers and property address record.

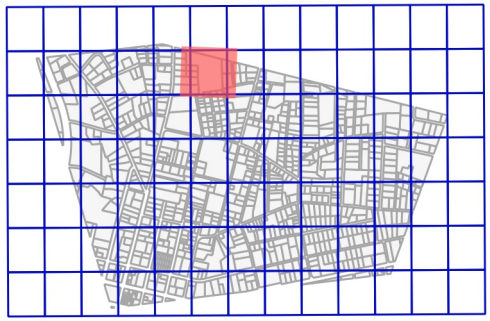

Hartwell sampling grid, Cell 43

Labels show parcel ID numbers and property address record.

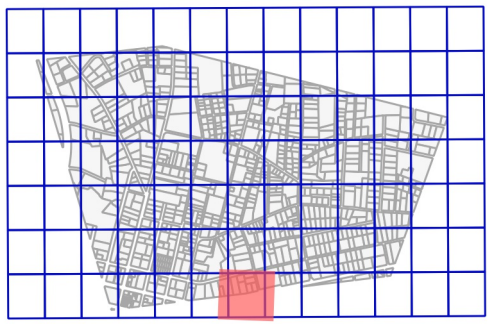

Hartwell sampling grid, Cell 44

Labels show parcel ID numbers and property address record.

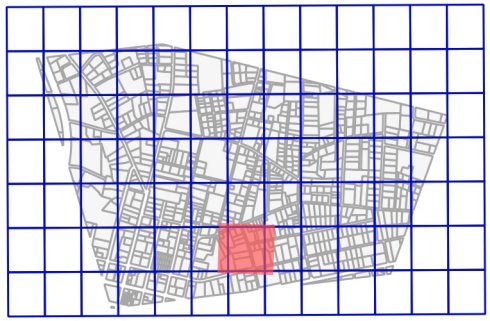

Hartwell sampling grid, Cell 45

Labels show parcel ID numbers and property address record.

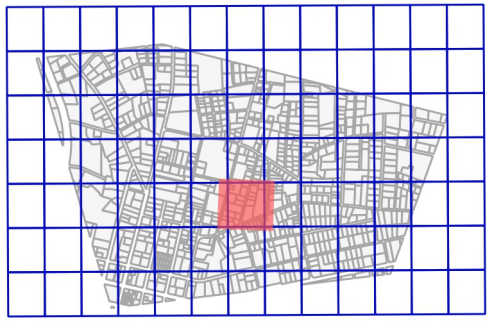

Hartwell sampling grid, Cell 46

Labels show parcel ID numbers and property address record.

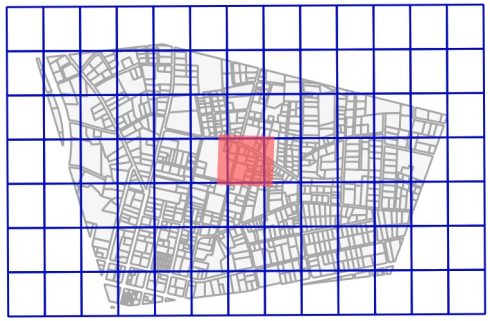

Hartwell sampling grid, Cell 47

Labels show parcel ID numbers and property address record.

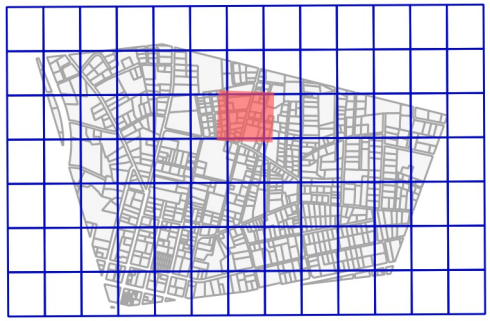

Hartwell sampling grid, Cell 48

Labels show parcel ID numbers and property address record.

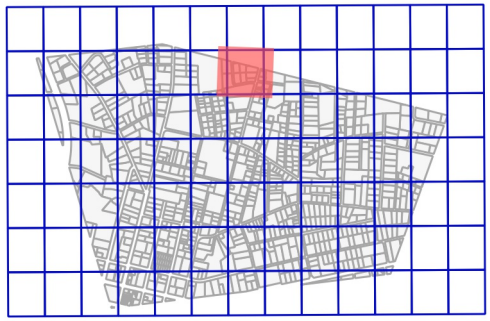

Hartwell sampling grid, Cell 50

Labels show parcel ID numbers and property address record.

East Johnson Street
I70A 085
478 E Johnson St
I70A 084
0 E Franklin St
I70A 083
526 E Johnson St
I70A 091
443 E Franklin St
Slaton Av
I70A 090
425 E Franklin St
I70A 089
407 E Franklin St
I70A 088
391 E Franklin St
I70A 087
375 E Franklin St
I70A 086
0 E Franklin St
Maple Street
East Franklin Street
East Franklin Street
East Franklin Street
I70A 216
0 E Franklin St
I70A 215
Campbell Drive
Campbell Drive
Powell Road

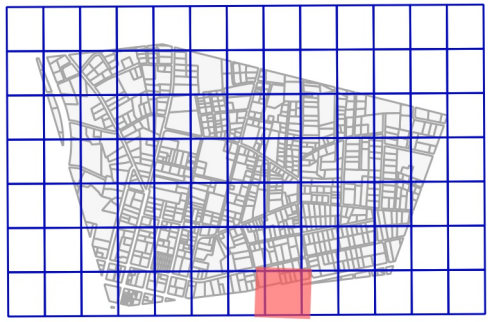

Hartwell sampling grid, Cell 51

Labels show parcel ID numbers and property address record.

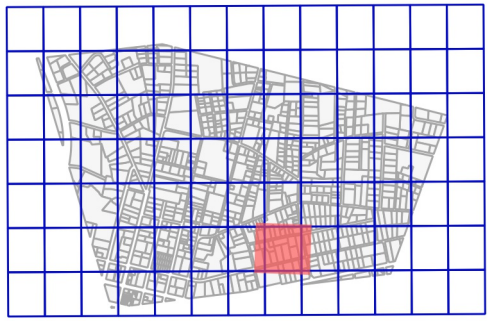

Hartwell sampling grid, Cell 52

Labels show parcel ID numbers and property address record.

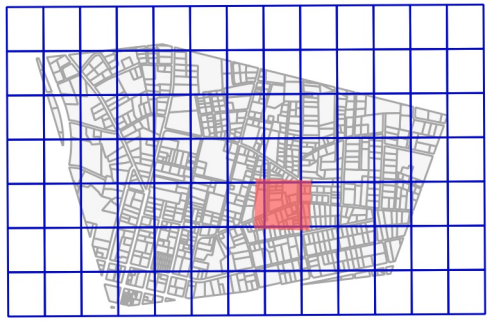

Hartwell sampling grid, Cell 53

Labels show parcel ID numbers and property address record.

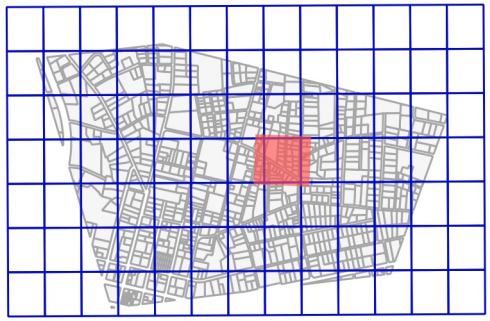

Hartwell sampling grid, Cell 54

Labels show parcel ID numbers and property address record.

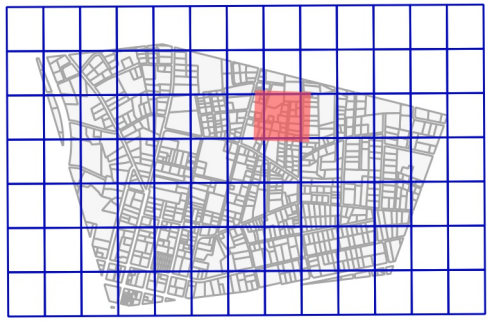

Hartwell sampling grid, Cell 55

Labels show parcel ID numbers and property address record.

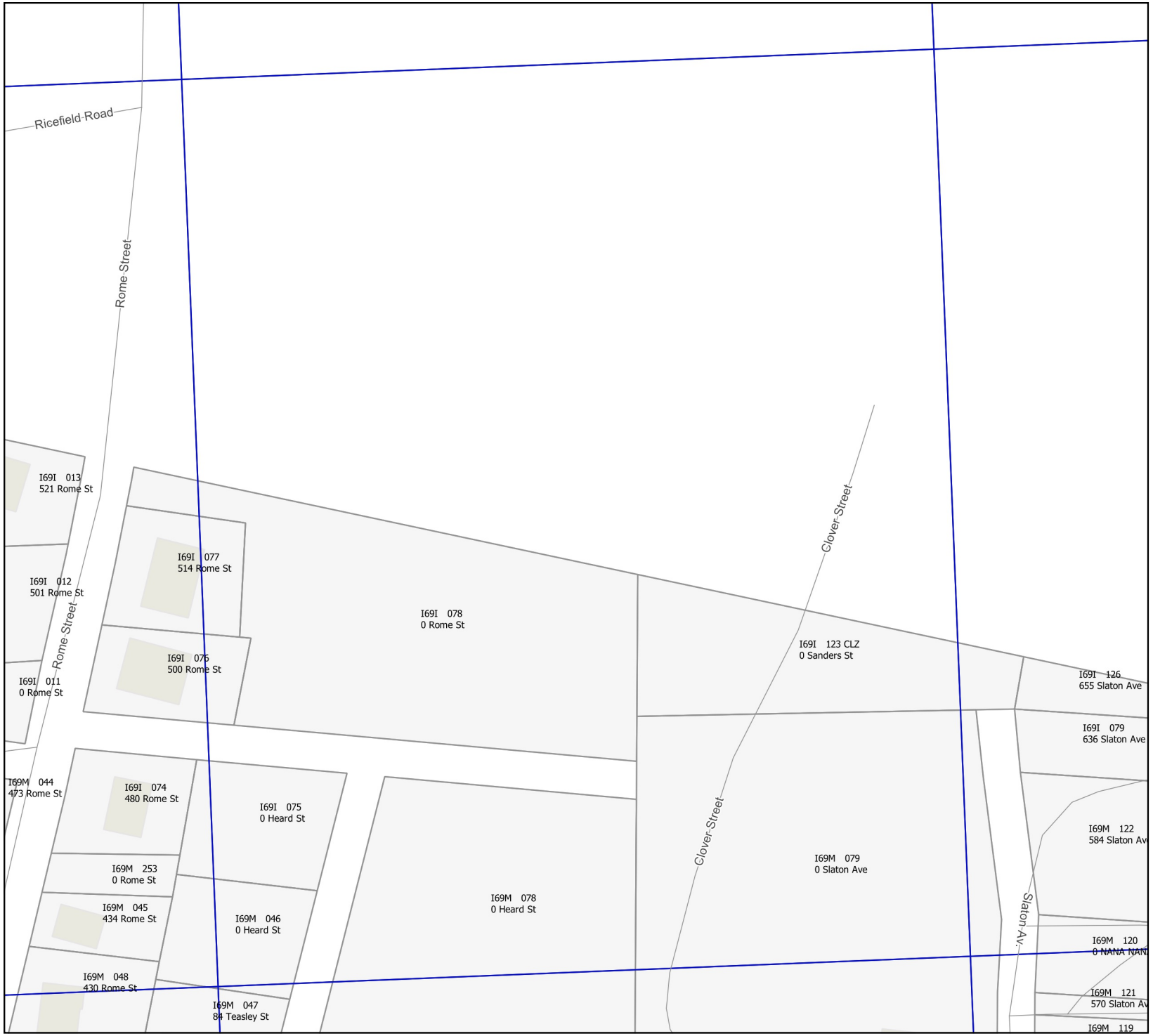

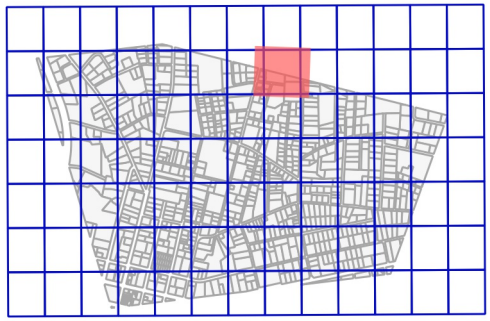

Hartwell sampling grid, Cell 57

Labels show parcel ID numbers and property address record.

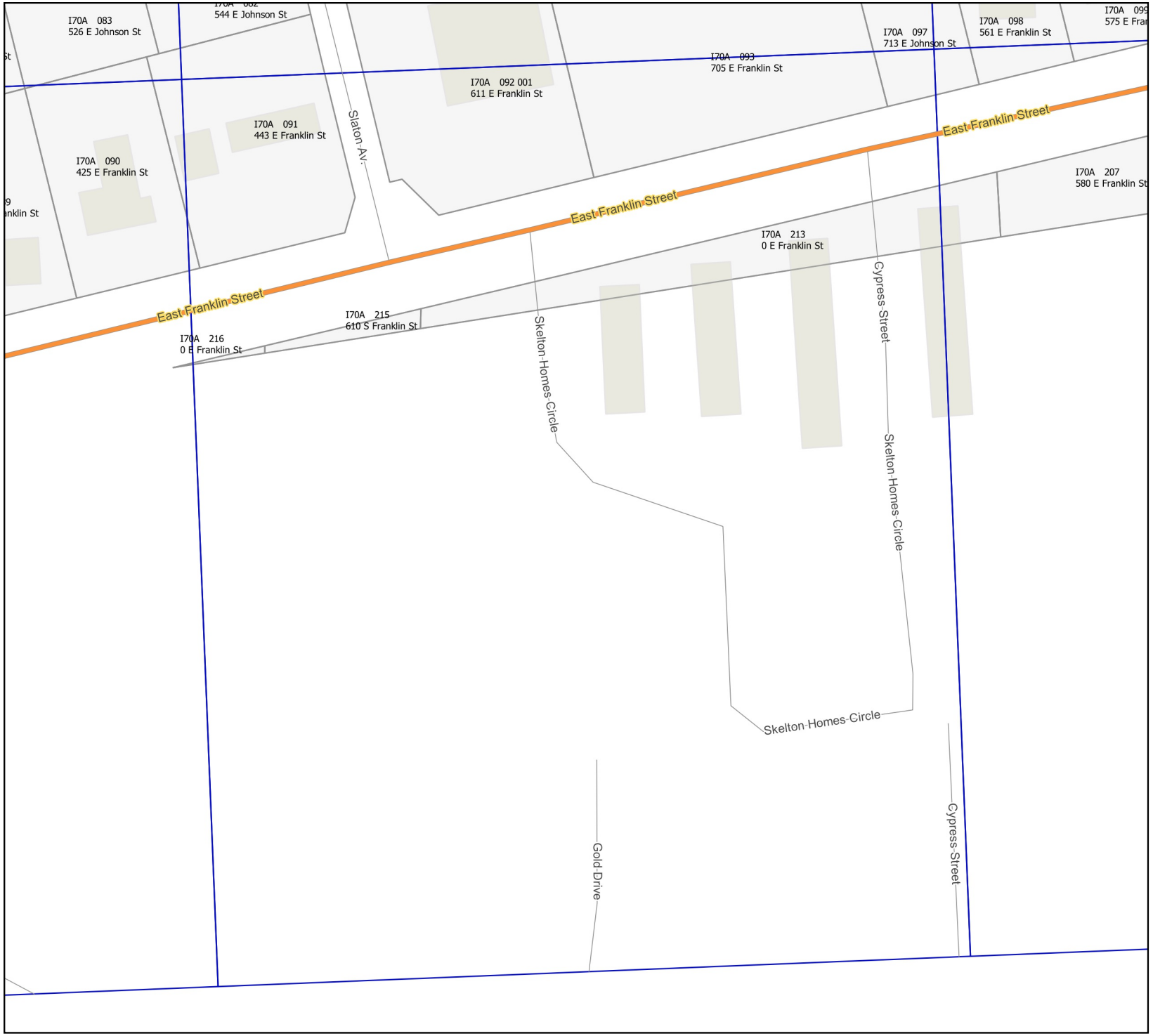

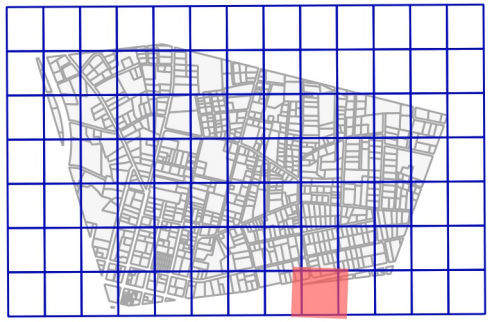

Hartwell sampling grid, Cell 58

Labels show parcel ID numbers and property address record.

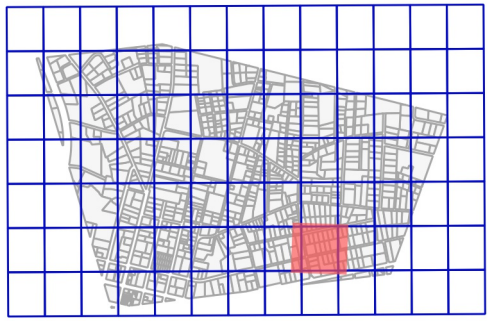

Hartwell sampling grid, Cell 59

Labels show parcel ID numbers and property address record.

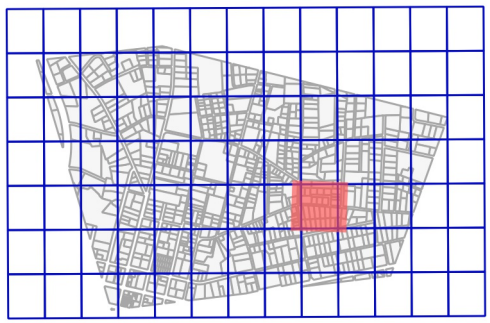

Hartwell sampling grid, Cell 60

Labels show parcel ID numbers and property address record.

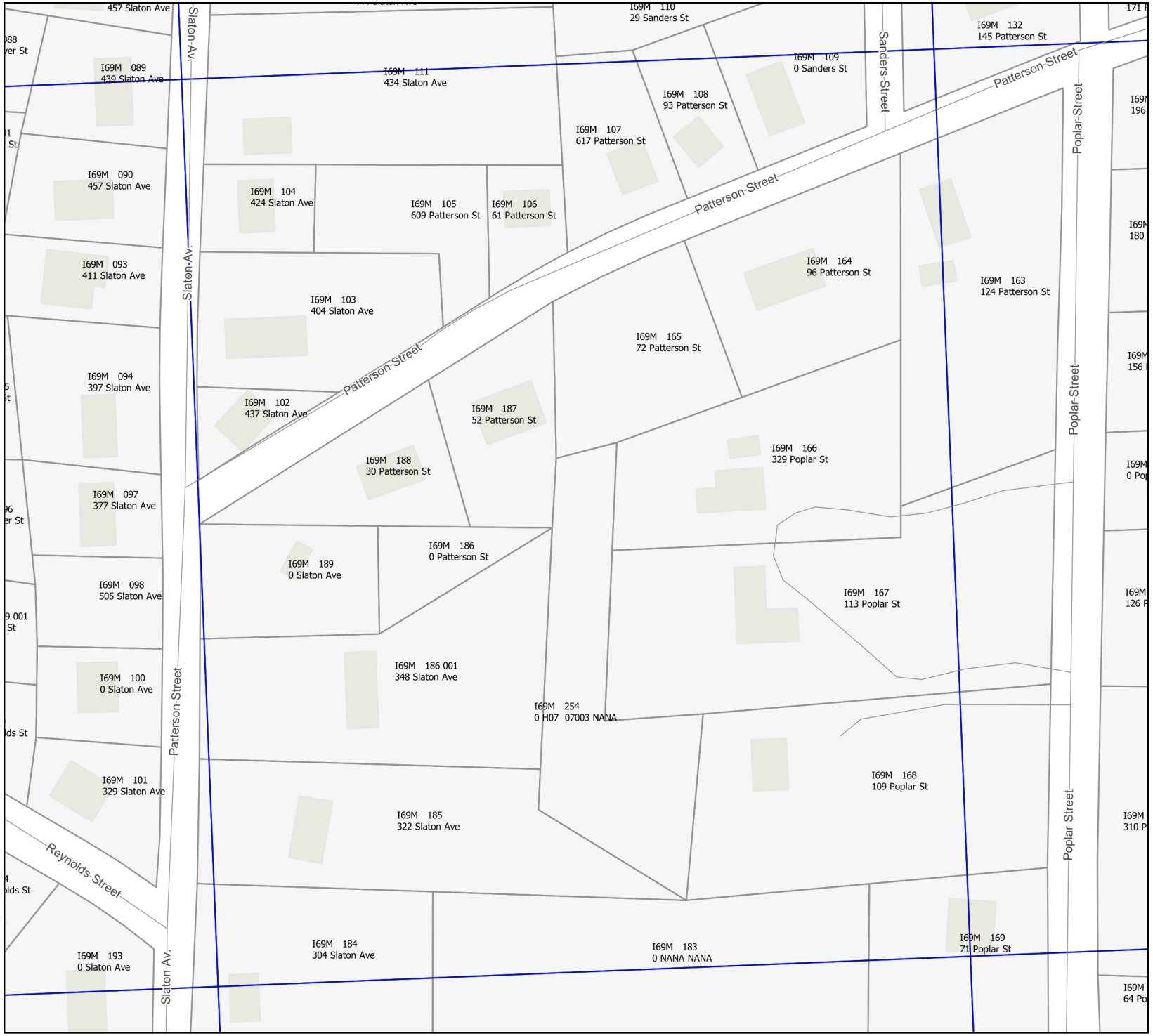

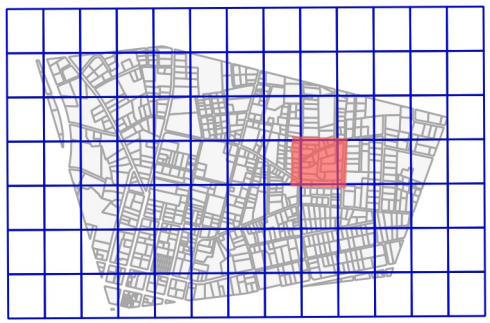

Hartwell sampling grid, Cell 61

Labels show parcel ID numbers and property address record.

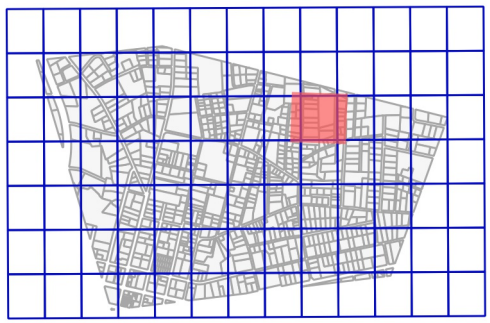

Hartwell sampling grid, Cell 62

Labels show parcel ID numbers and property address record.

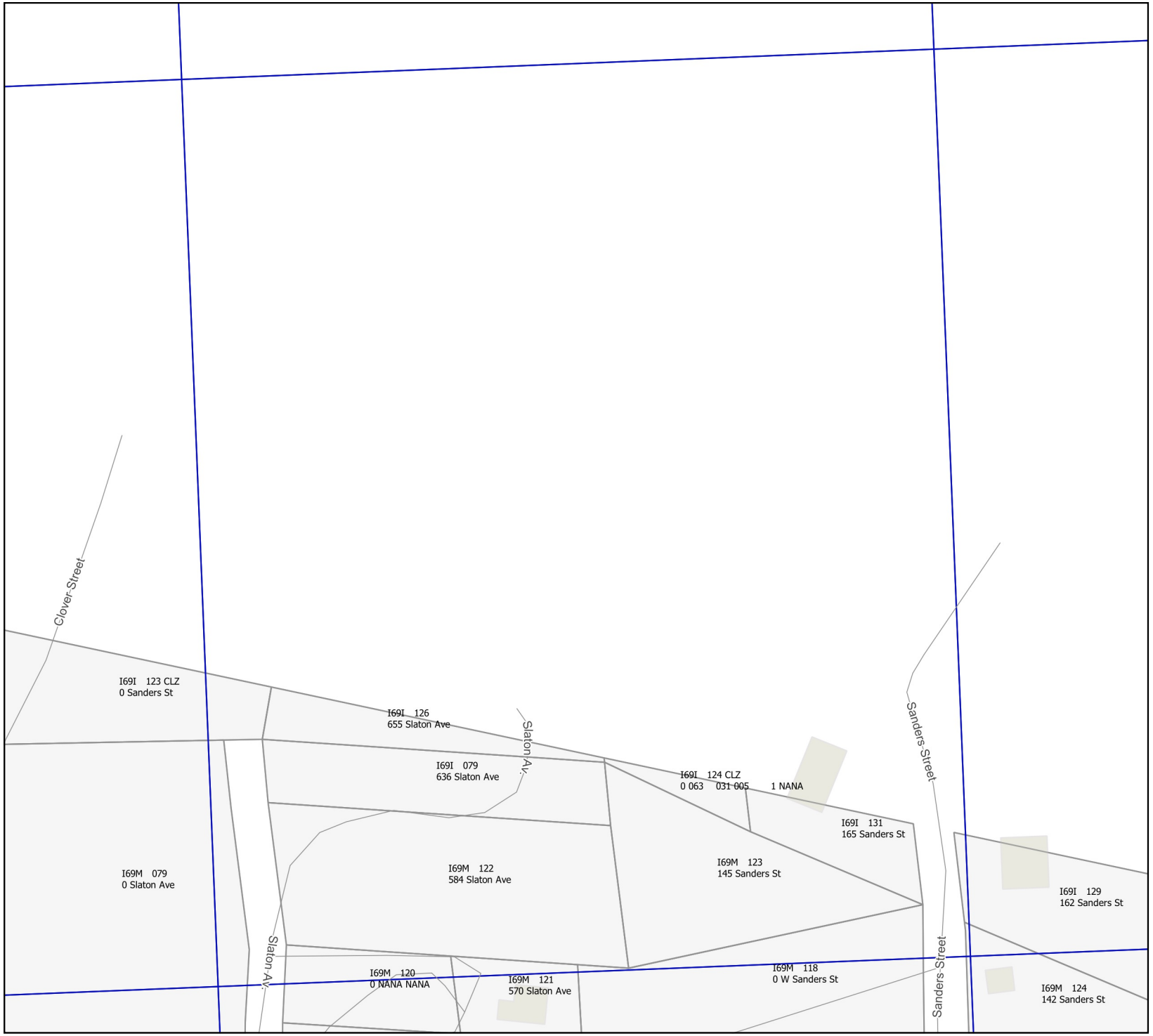

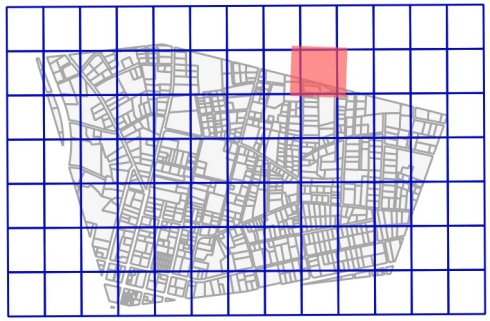

Hartwell sampling grid, Cell 64

Labels show parcel ID numbers and property address record.

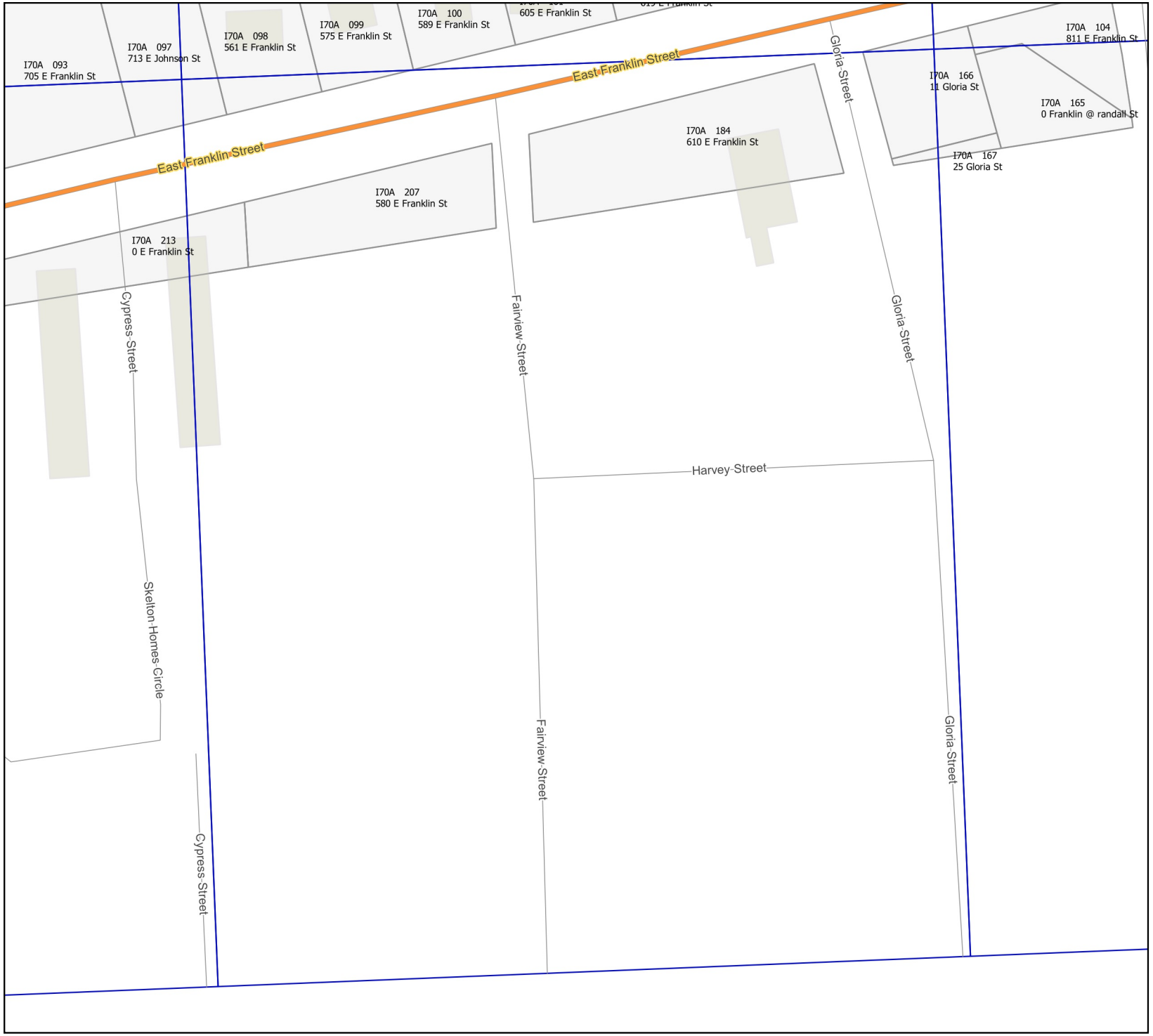

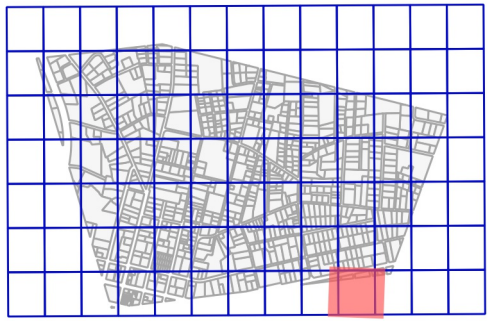

Hartwell sampling grid, Cell 65

Labels show parcel ID numbers and property address record.

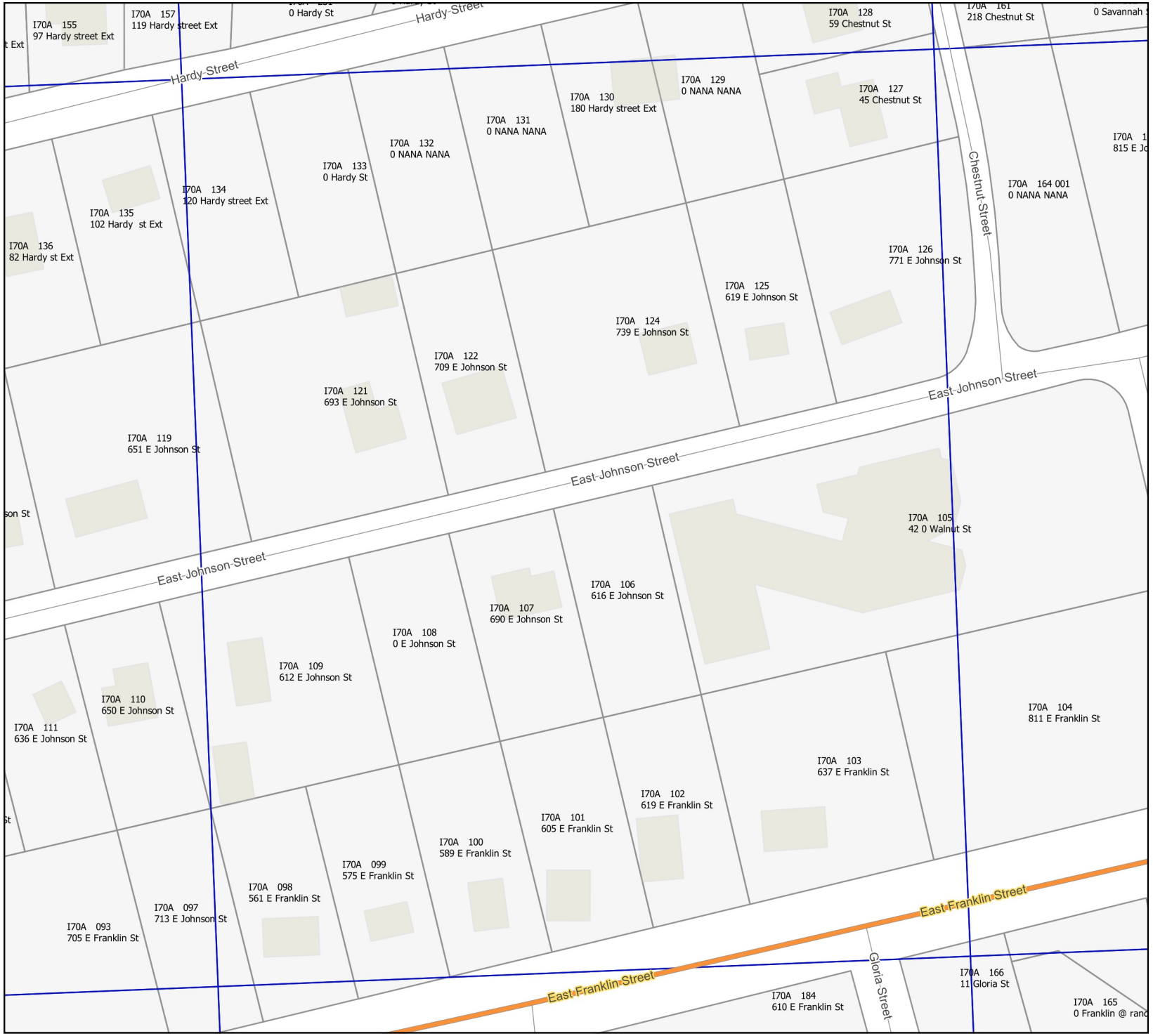

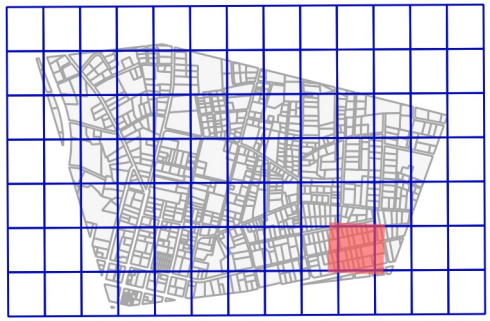

Hartwell sampling grid, Cell 66

Labels show parcel ID numbers and property address record.

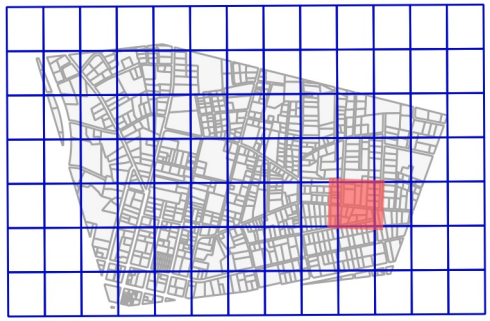

Hartwell sampling grid, Cell 67

Labels show parcel ID numbers and property address record.

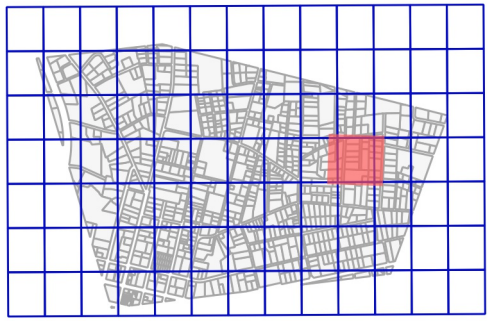

Hartwell sampling grid, Cell 68

Labels show parcel ID numbers and property address record.

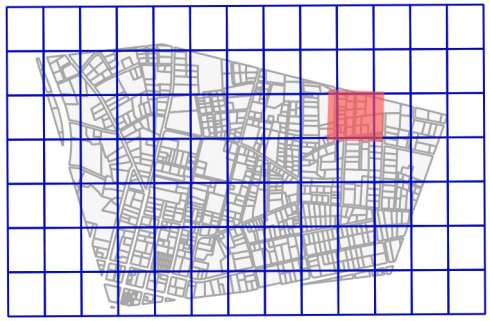

Hartwell sampling grid, Cell 69

Labels show parcel ID numbers and property address record.

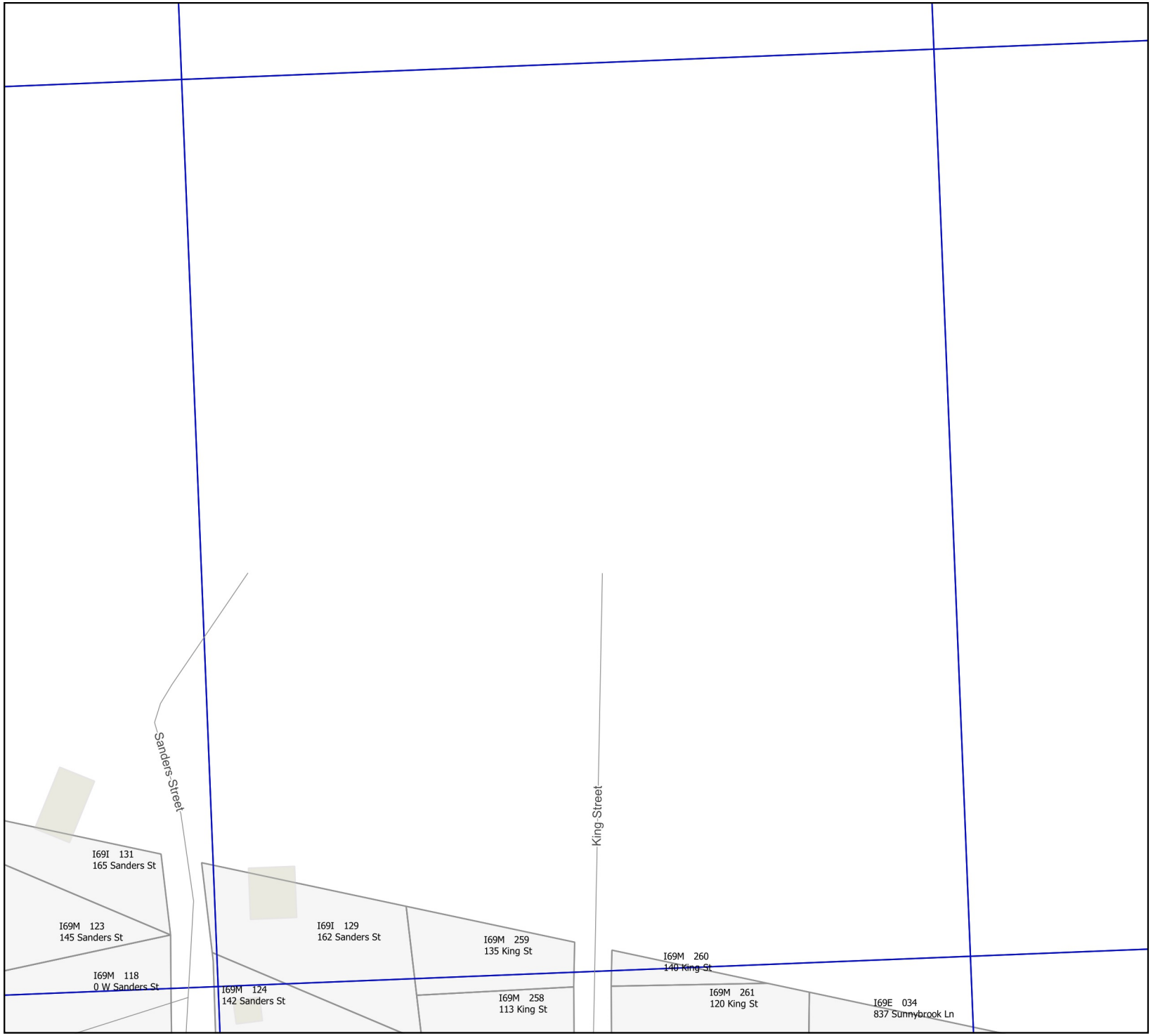

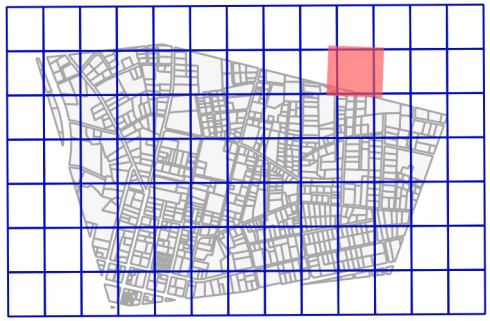

Hartwell sampling grid, Cell 71

Labels show parcel ID numbers and property address record.

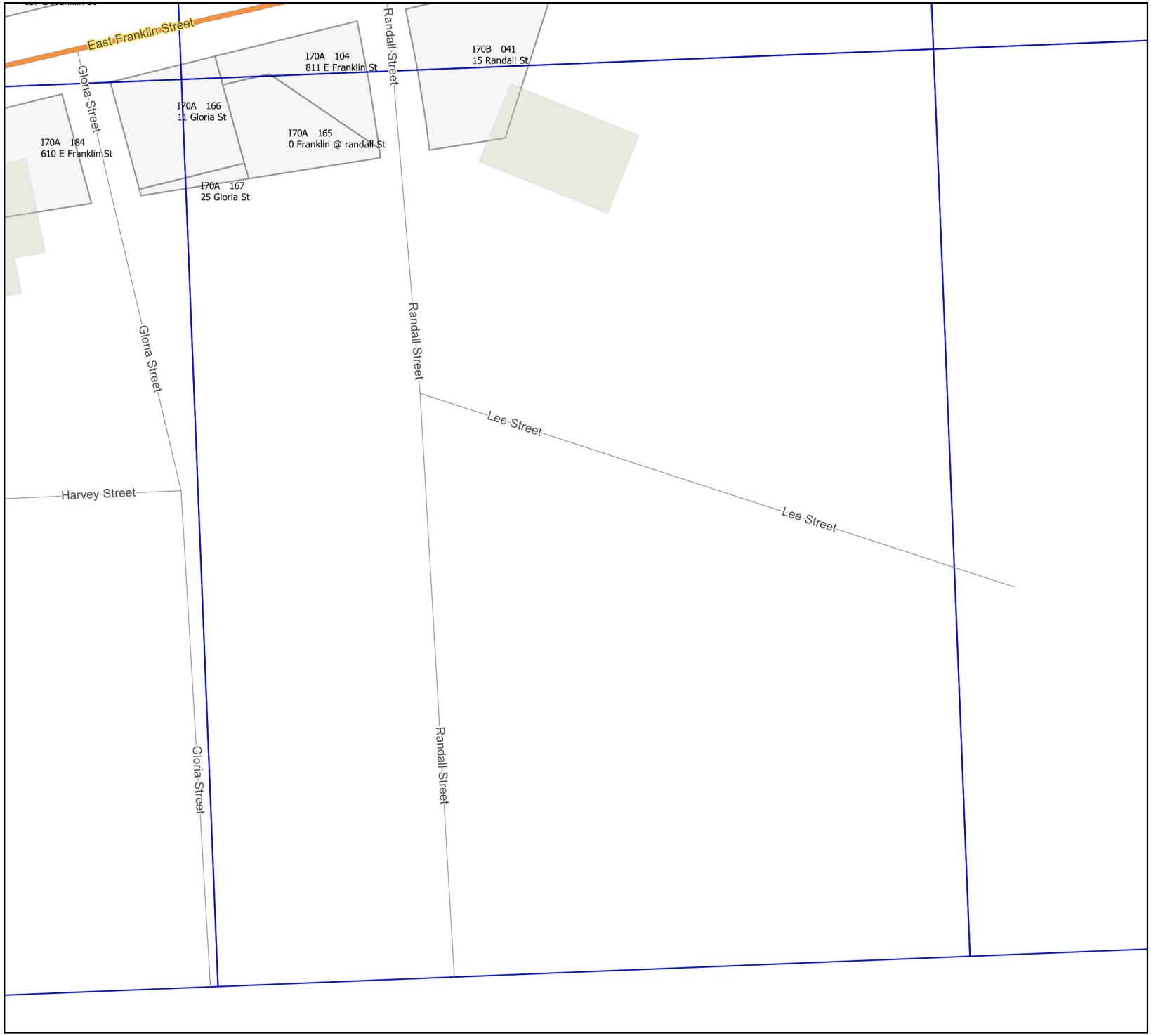

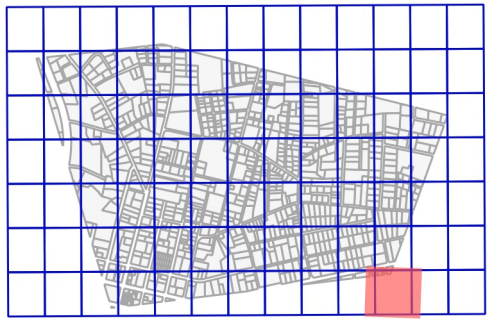

Hartwell sampling grid, Cell 72

Labels show parcel ID numbers and property address record.

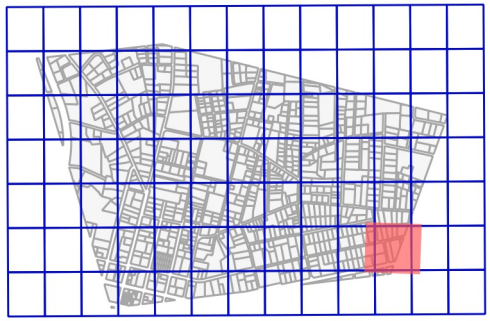

Hartwell sampling grid, Cell 73

Labels show parcel ID numbers and property address record.

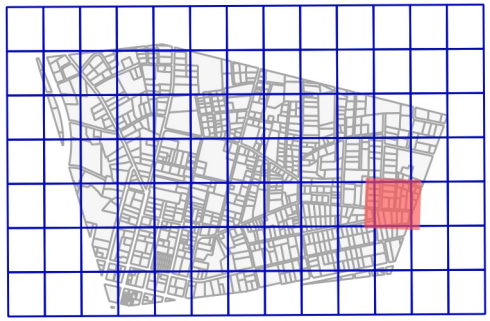

Hartwell sampling grid, Cell 74

Labels show parcel ID numbers and property address record.

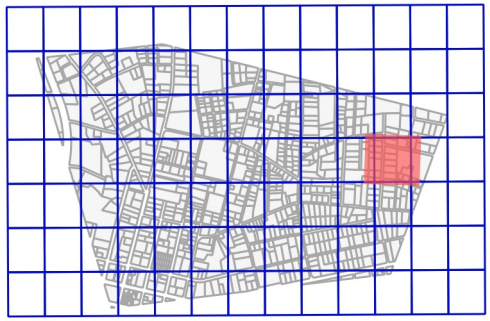

Hartwell sampling grid, Cell 75

Labels show parcel ID numbers and property address record.

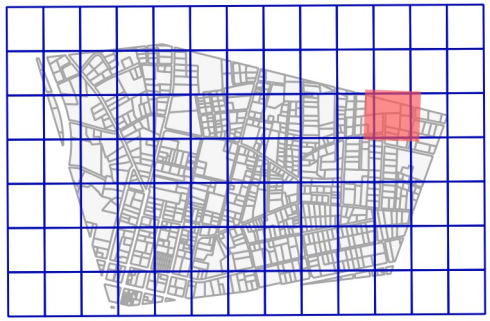

Hartwell sampling grid, Cell 80

Labels show parcel ID numbers and property address record.

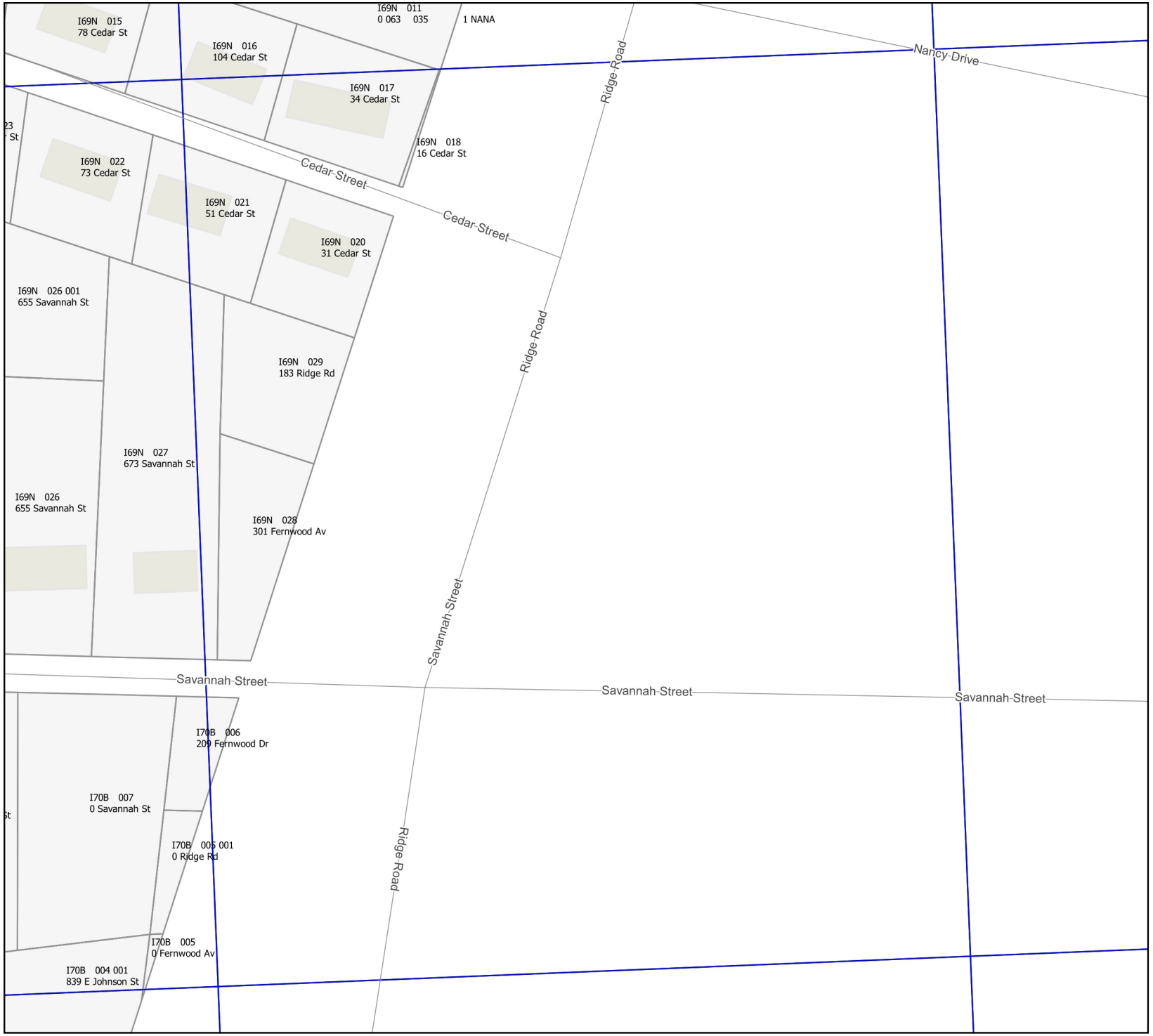

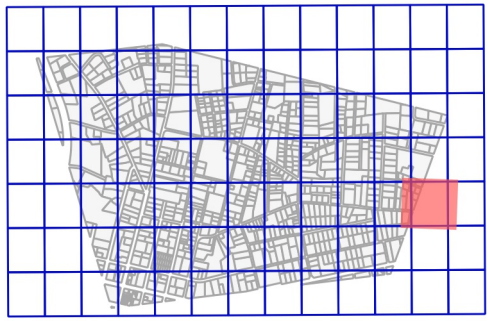

Hartwell sampling grid, Cell 81

Labels show parcel ID numbers and property address record.

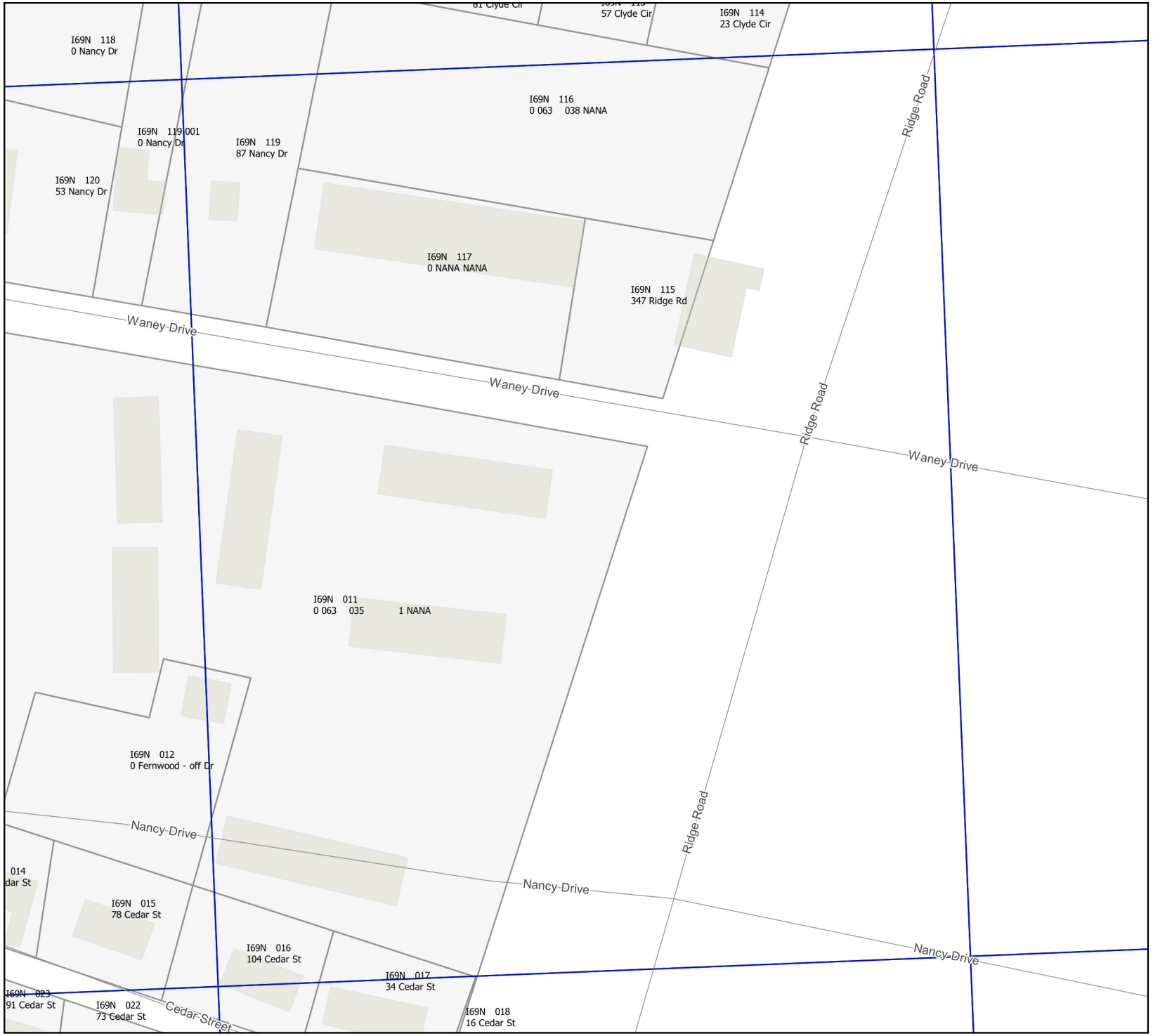

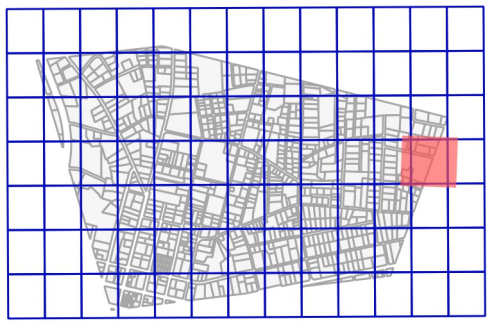

Hartwell sampling grid, Cell 82
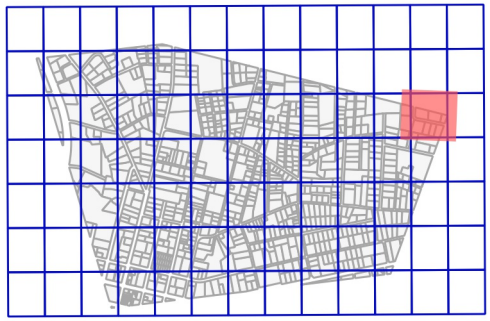
Labels show parcel ID numbers and property address record.